BHAVAN'S COLLEGE AUTONOMOUS, ANDHERI-WEST
PRACTICAL JOURNAL

Class: TYIT **Sem: V** **Roll No.: TYIT61** **Date: 23-12-25**

Course Name: Geographic Information System (GIS) **Page no:**

Practical Number :- 03

Q] Create a Map:

A} Working with Attributes.

- Open a Thematic Map. Go to Add Layer -> Vector Layer -> Practical 3 -> India_State_adm1
- Import all Maps of Maharashtra.

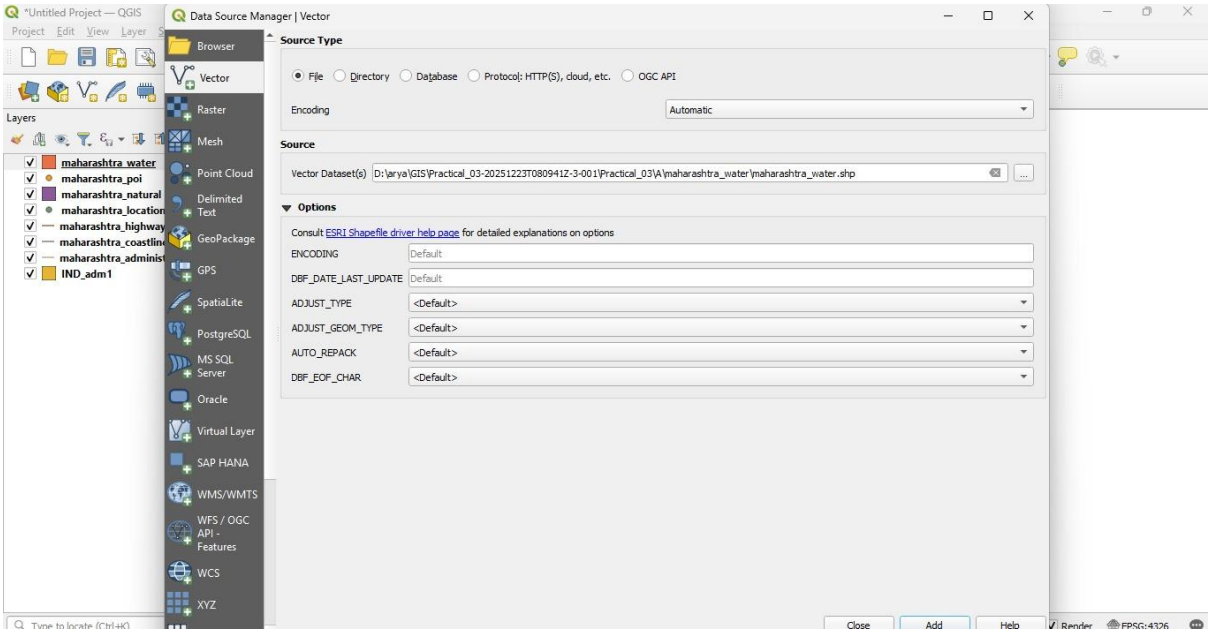

- Go to Project → New PrintLayout
- Insert a suitable title and press "OK".

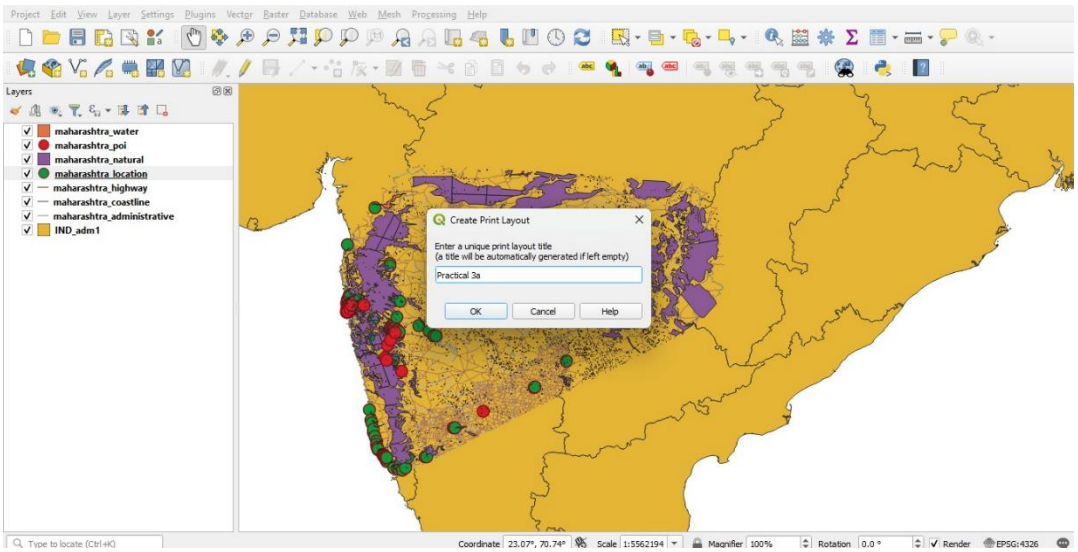

Teacher's Signature

- A new Print Layout window will open.

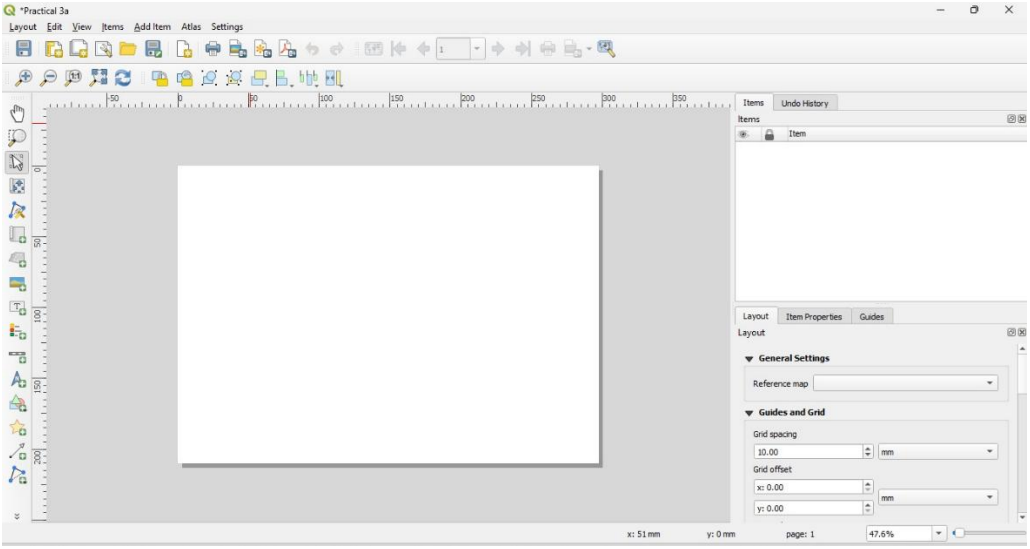

- Select Add Item → Add Map

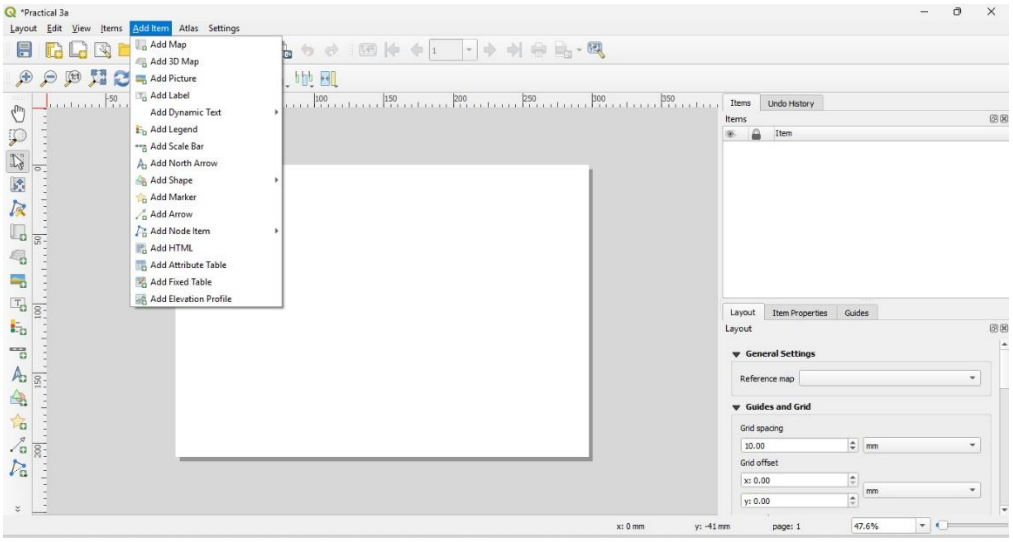

Teacher's Signature

BHAVAN'S COLLEGE AUTONOMOUS, ANDHERI-WEST
PRACTICAL JOURNAL

Class: TYIT **Sem: V** **Roll No.: TYIT61** **Date: 23-12-25**

Course Name: Geographic Information System (GIS) **Page no:**

Practical Number :- 03

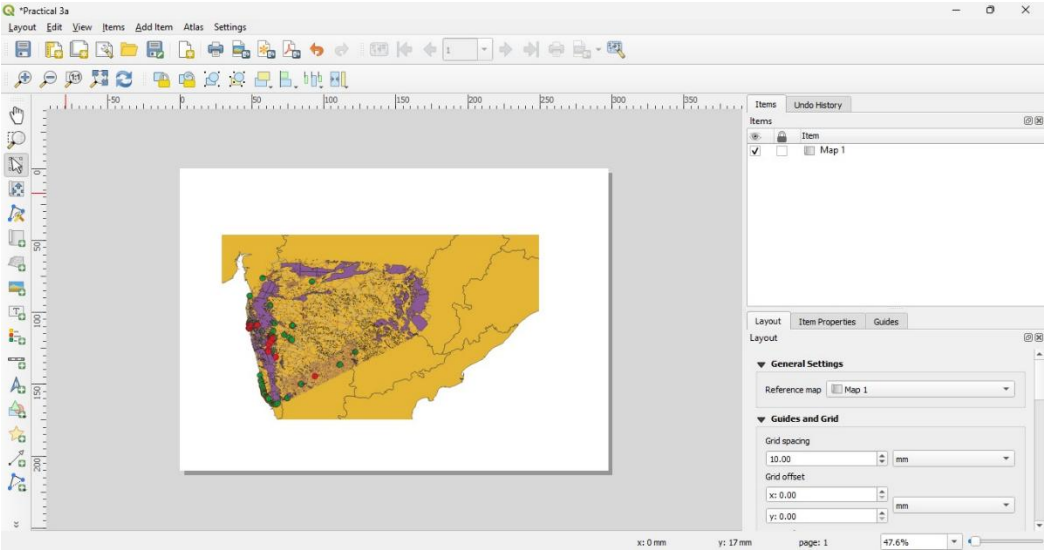

- After adding map go to ItemProperties → Map1→ Layers Check on Lock Layers and Lock Styles for Layers.
  This will ensure that if any change in layers or change their styles, the Print Layout view will not change

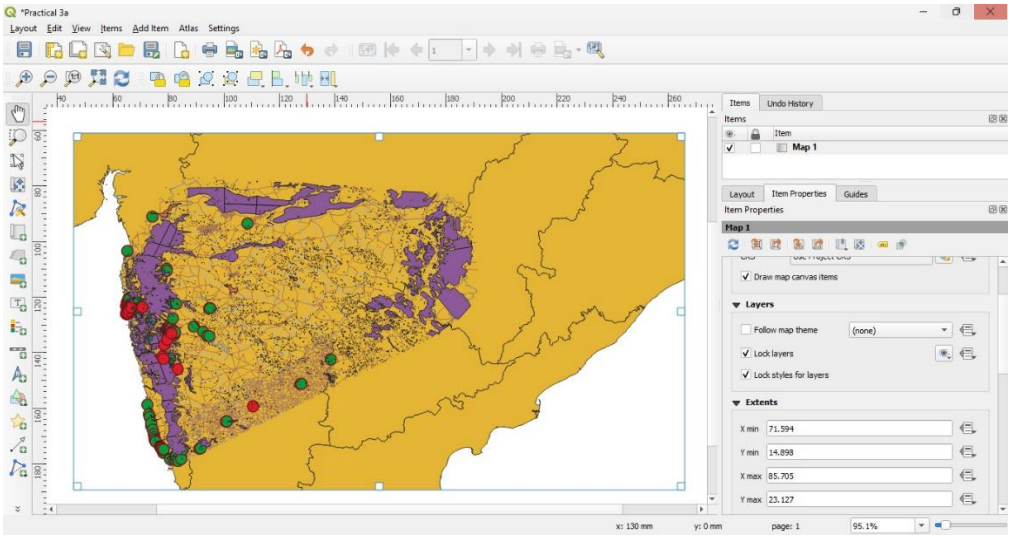

- Go to Add Item → Add Picture → Place a picture box at appropriate location.

Teacher's Signature

BHAVAN'S COLLEGE AUTONOMOUS, ANDHERI-WEST
PRACTICAL JOURNAL

Class: TYIT **Sem: V** **Roll No.: TYIT61** **Date: 23-12-25**

Course Name: Geographic Information System (GIS) **Page no:**

Practical Number :- 03

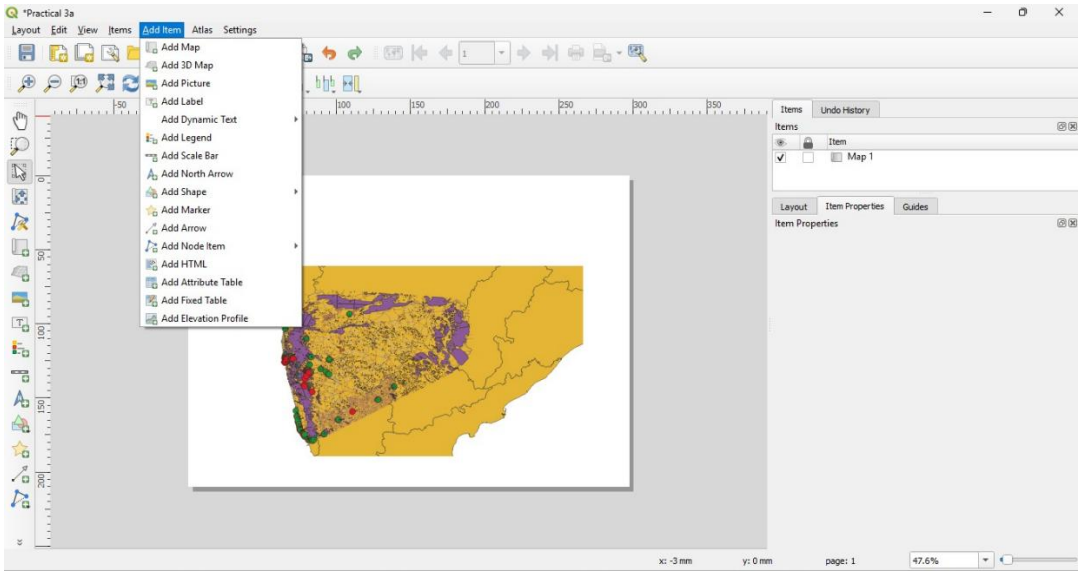

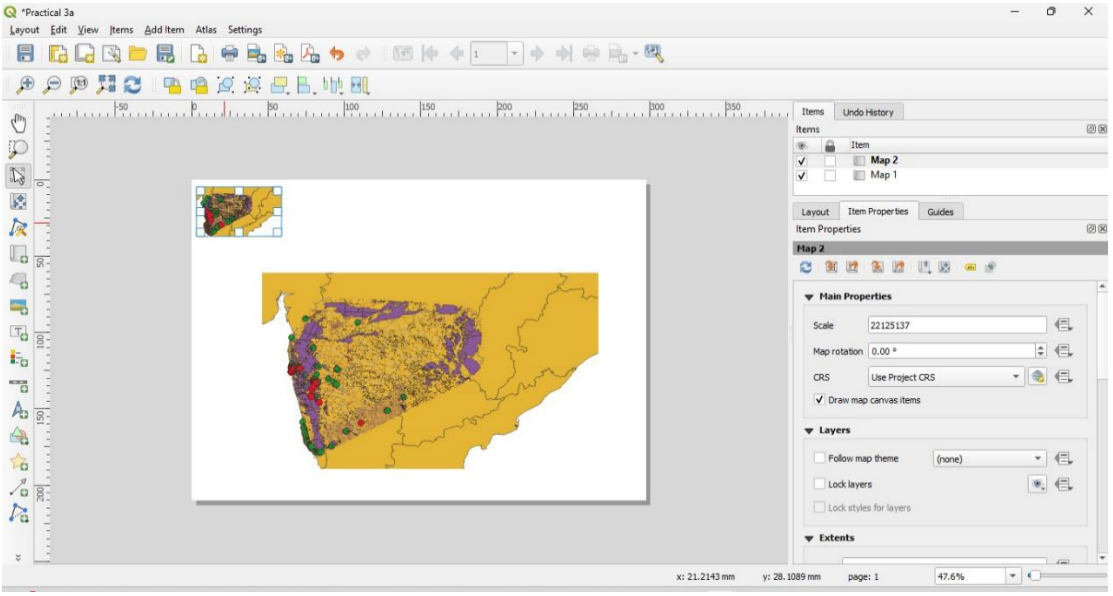

- Set a frame for Inset by enabling the check box for Frame.

Teacher's Signature

BHAVAN'S COLLEGE AUTONOMOUS, ANDHERI-WEST
PRACTICAL JOURNAL

Class: TYIT **Sem: V** **Roll No.: TYIT61** **Date: 23-12-25**

Course Name: Geographic Information System (GIS) **Page no:**

Practical Number :- 03

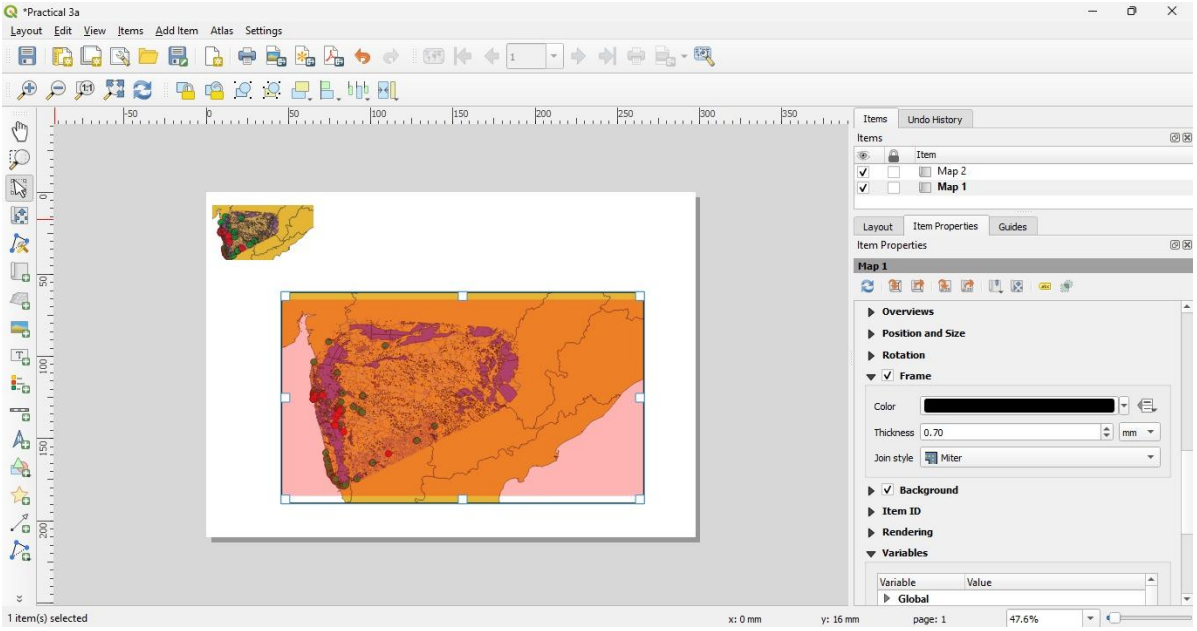

- To highlight the area shown in Inset,
- Select the Picture representing main Map from Items pane.
- In Item Properties → Overviews → using icon add an overview.

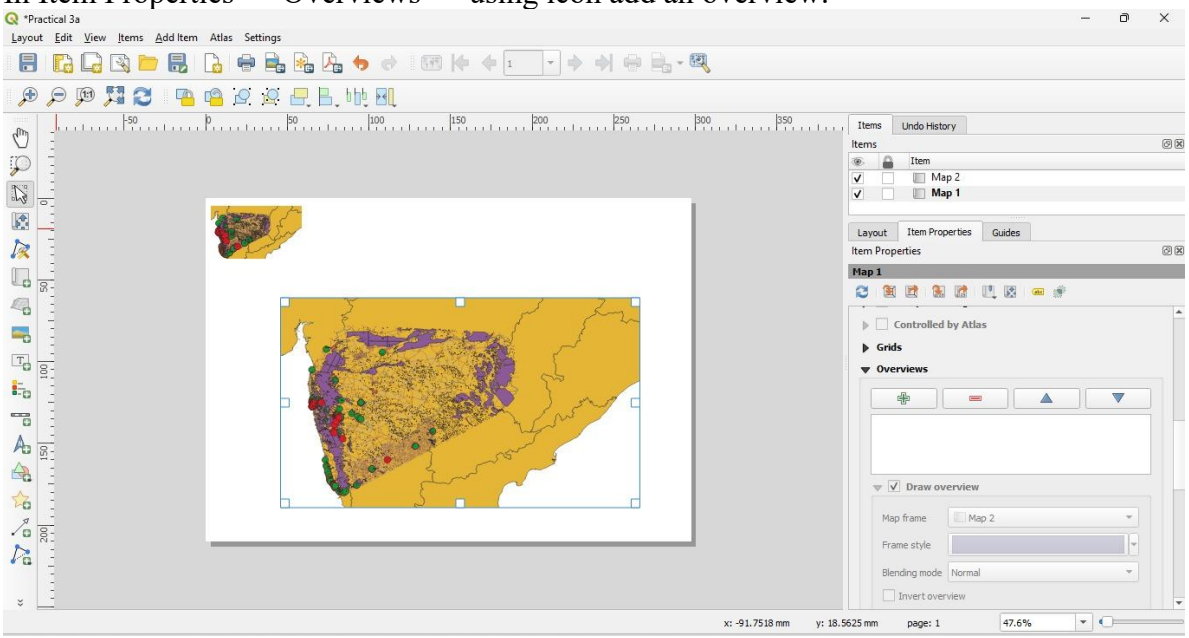

- Select the checkbox Draw Overview. Name the Picture object representing inset (Map1 in our case).

Teacher's Signature

BHAVAN'S COLLEGE AUTONOMOUS, ANDHERI-WEST
PRACTICAL JOURNAL

Class: TYIT **Sem: V** **Roll No.: TYIT61** **Date: 23-12-25**

Course Name: Geographic Information System (GIS) **Page no:**

Practical Number :- 03

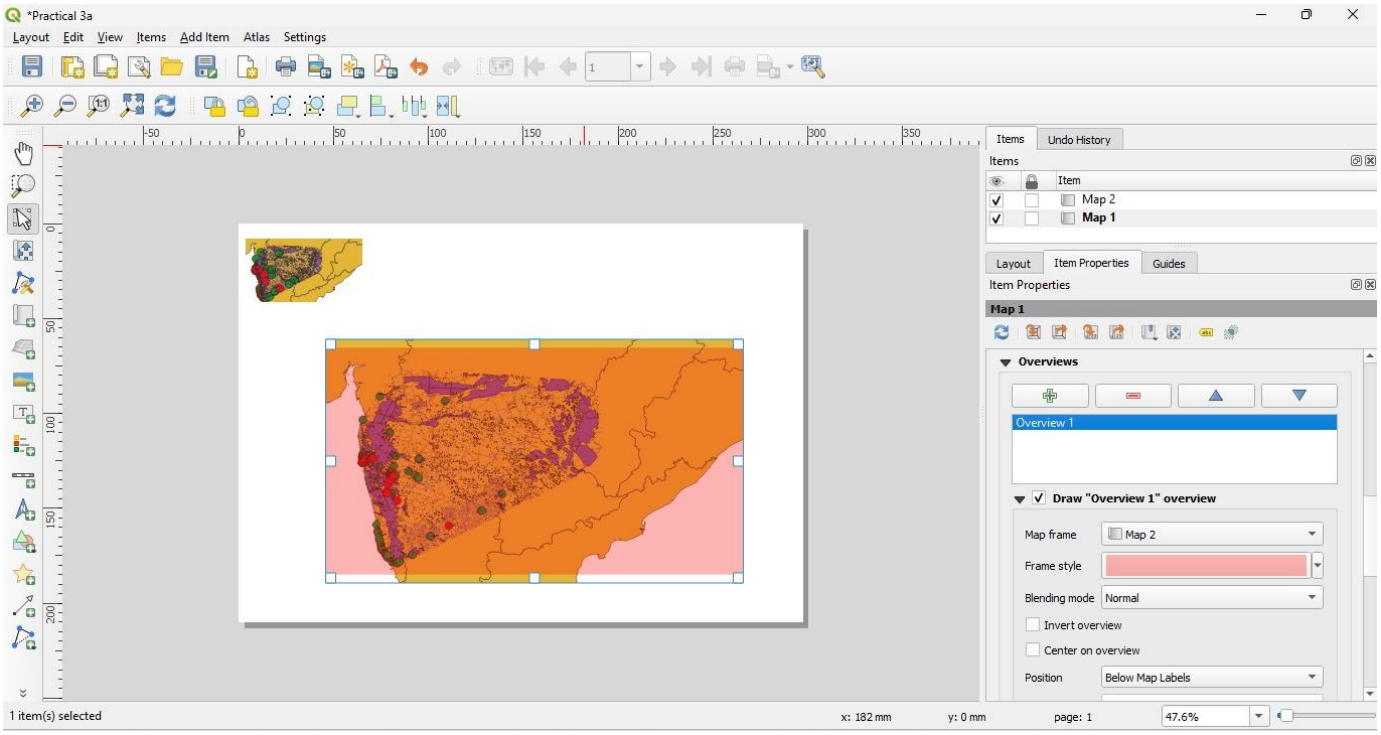

- Add Item → Add Label
- Change the Label text To "Mumbai Map TYIT38", Set appropriate font size and color using Item Properties→ Main Properties. Also add a text saying "Copyright Reserve TYIT61"

Teacher's Signature

BHAVAN'S COLLEGE AUTONOMOUS, ANDHERI-WEST
PRACTICAL JOURNAL

Class: TYIT **Sem: V** **Roll No.: TYIT61** **Date: 23-12-25**

Course Name: Geographic Information System (GIS) **Page no:**

Practical Number :- 03

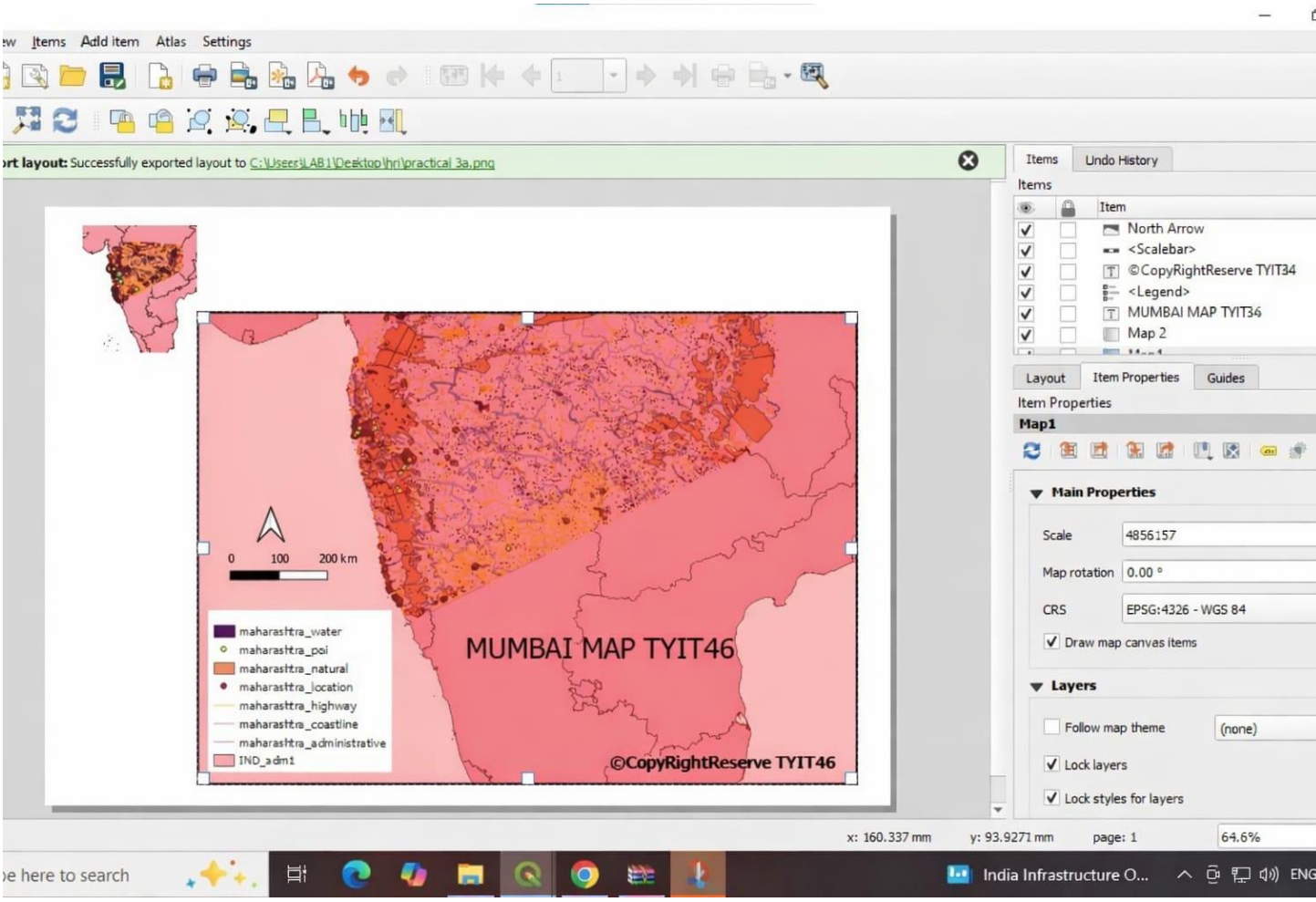

- Add Item → Add Legend→ Place the legend indicator at appropriate location.
- Uncheck auto update and use suitable legend indicator label.

Teacher's Signature

BHAVAN'S COLLEGE AUTONOMOUS, ANDHERI-WEST
PRACTICAL JOURNAL

Class: TYIT **Sem: V** **Roll No.: TYIT61** **Date: 23-12-25**

Course Name: Geographic Information System (GIS) **Page no:**

Practical Number :- 03

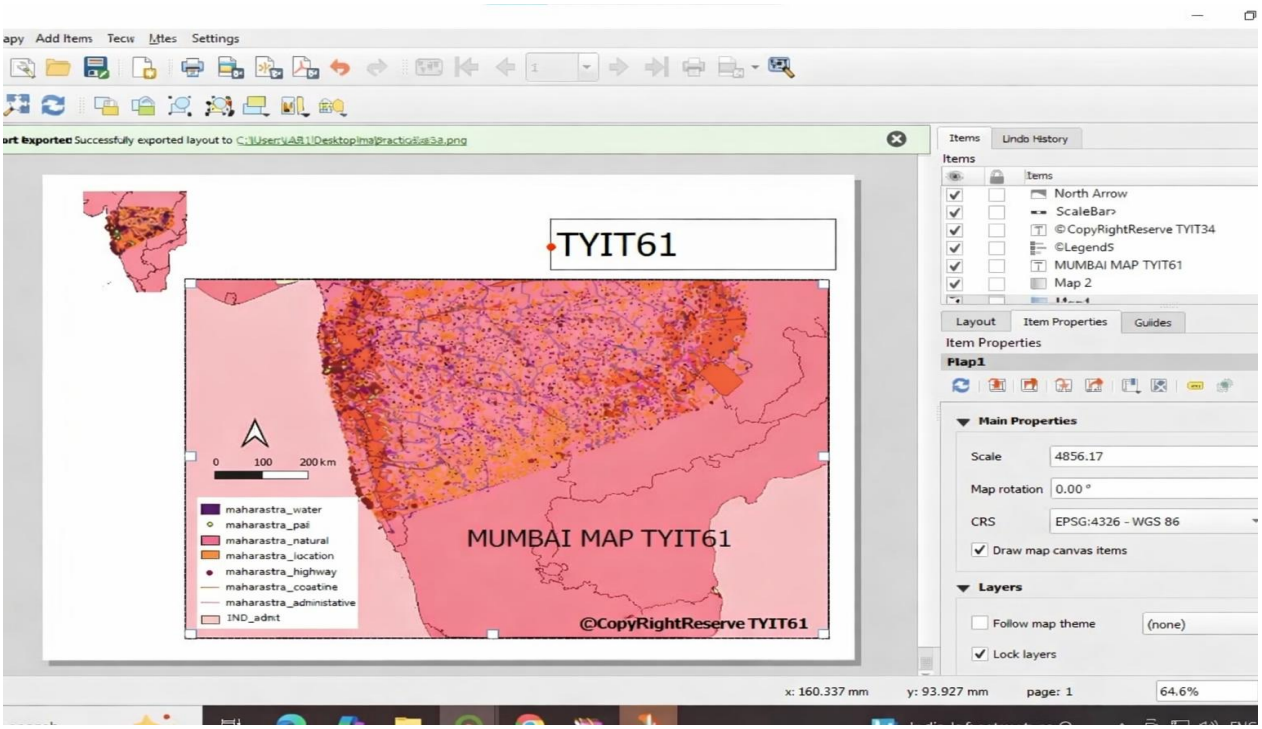

- The Print Layout will appear

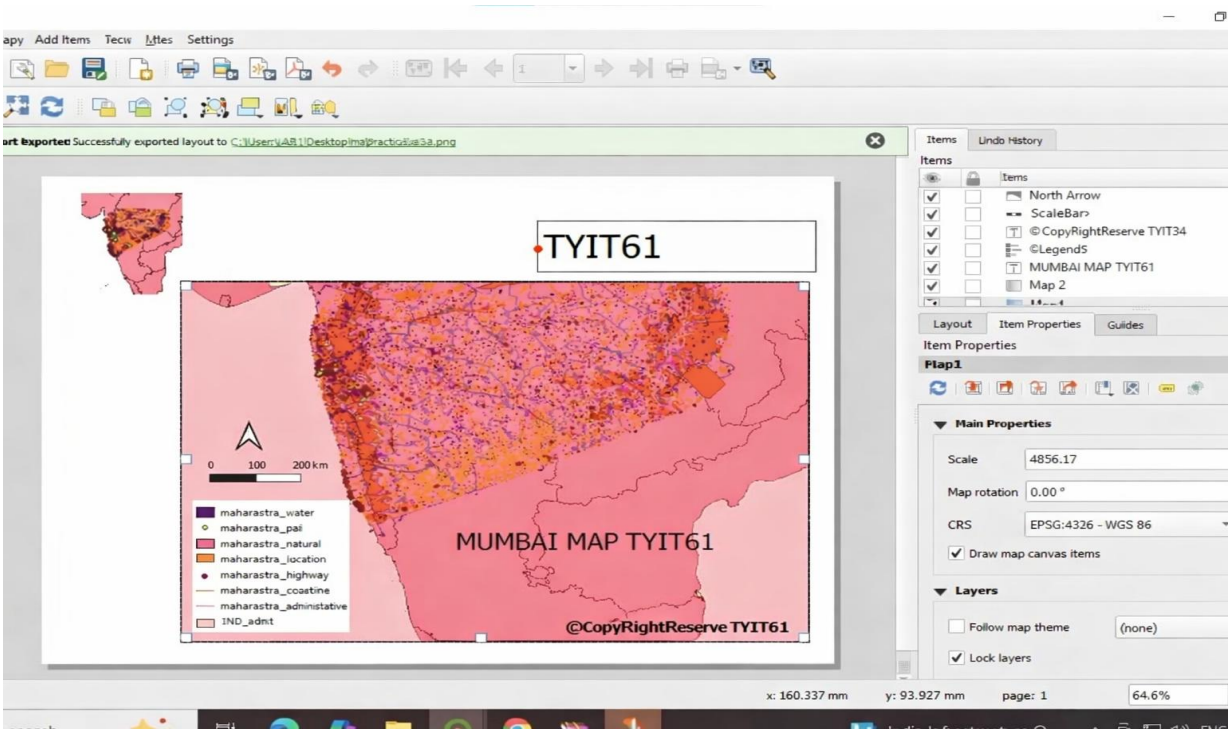

Teacher's Signature

BHAVAN'S COLLEGE AUTONOMOUS, ANDHERI-WEST
PRACTICAL JOURNAL

Class: TYIT **Sem: V** **Roll No.: TYIT61** **Date: 23-12-25**

Course Name: Geographic Information System (GIS) **Page no:**

Practical Number :- 03

- Add Item → Add Scale Bar

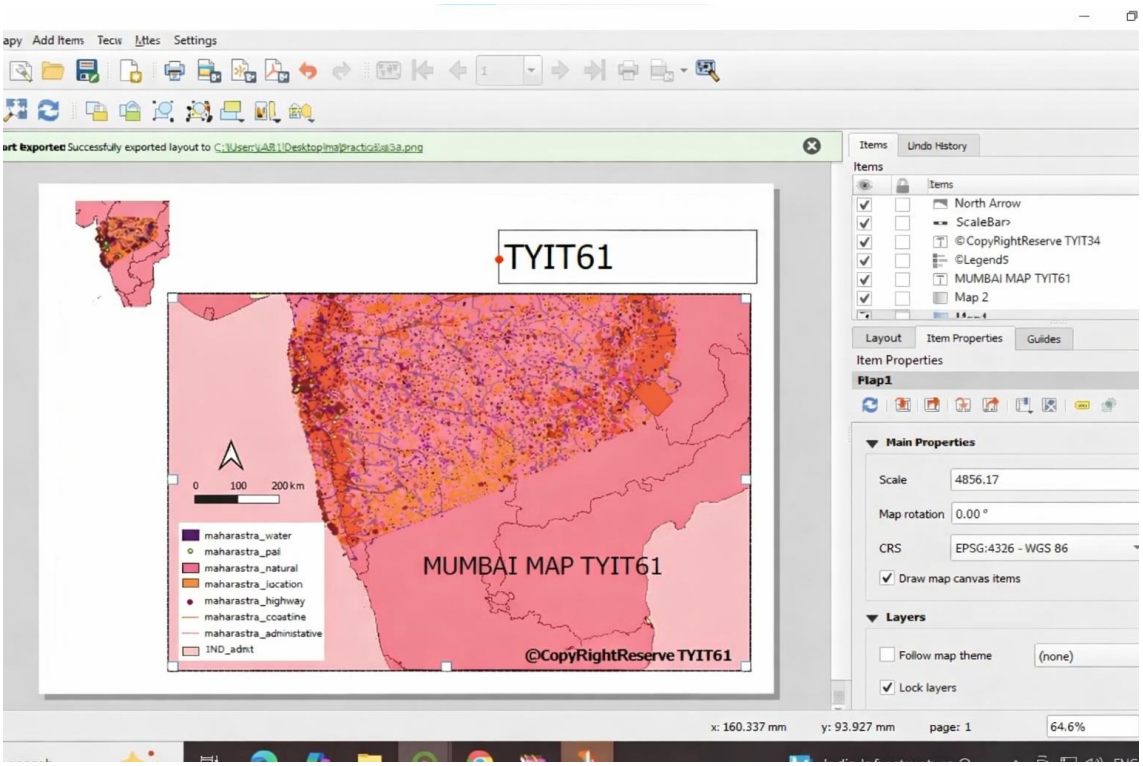

- A Map can be saved in Image or PDF using Layout → Export as Image / Export as PDF

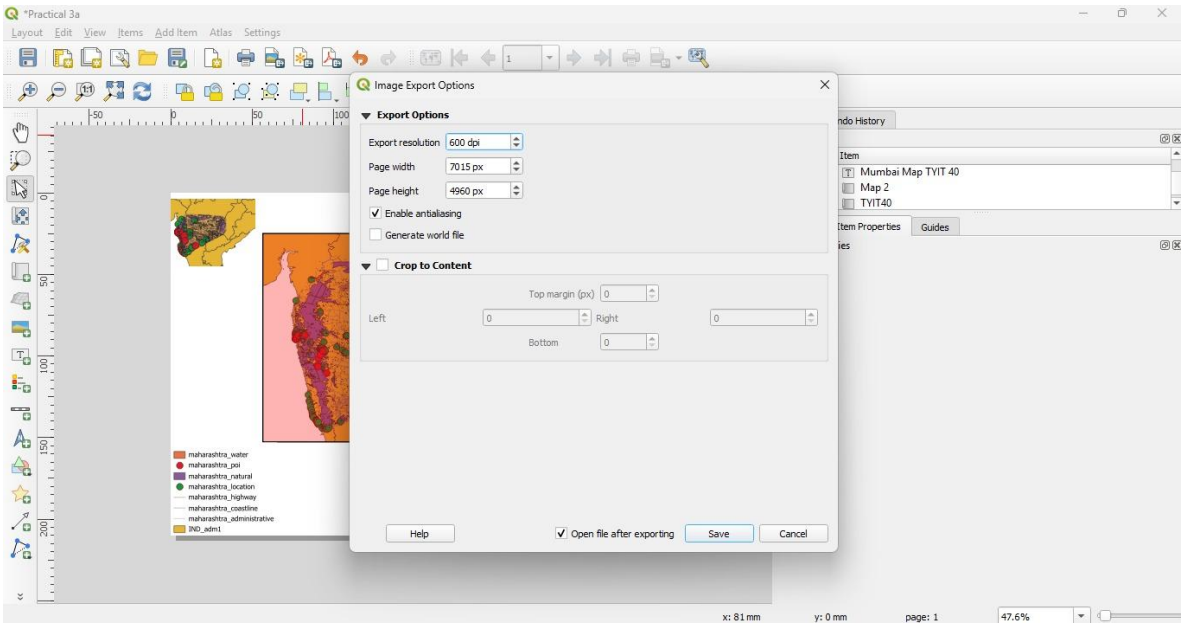

Teacher's Signature

BHAVAN'S COLLEGE AUTONOMOUS, ANDHERI-WEST
PRACTICAL JOURNAL

Class: TYIT **Sem: V** **Roll No.: TYIT61** **Date: 23-12-25**

Course Name: Geographic Information System (GIS) **Page no:**

Practical Number :- 03

- Open the PDF or Image from location.

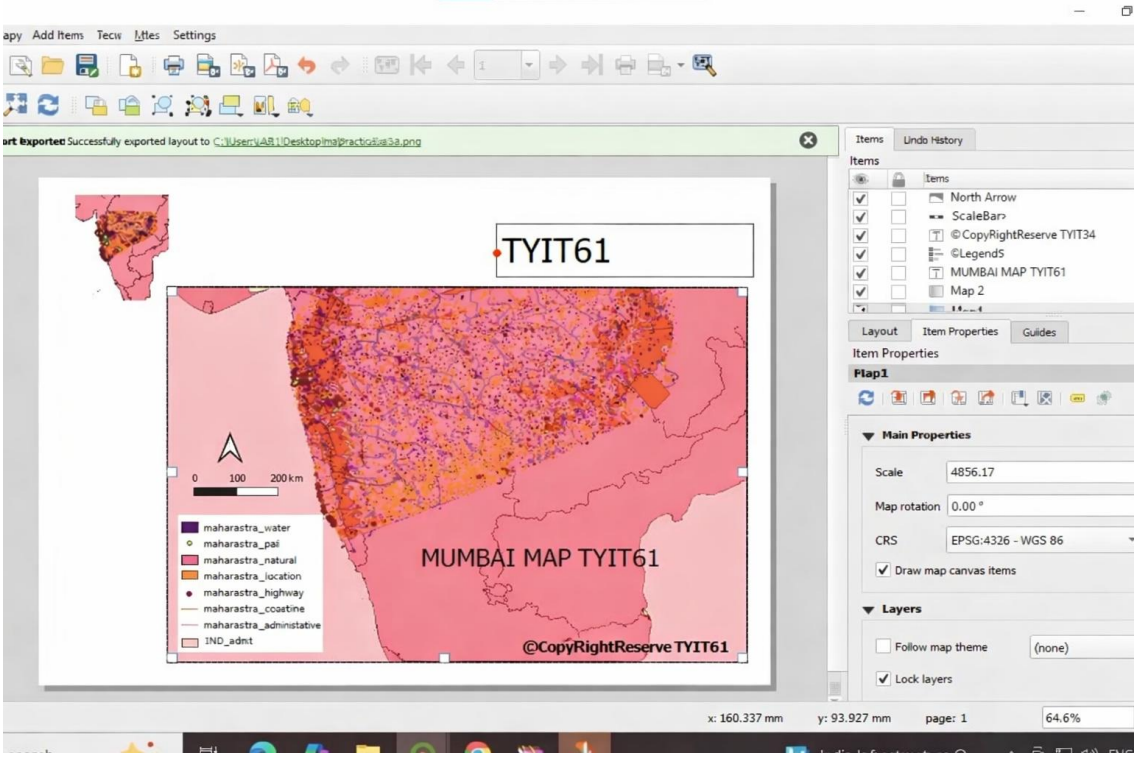

B} Importing Spreadsheets or CSV files

- Many times the GIS data comes in a table or an Excel spreadsheet or a list lat/long coordinates, therefore it has to be imported in a GIS project.
- Sample file for Earthquake data will be used in this practical.
- Go to Layer → Add Layer → Add Delimited text Layer

Teacher's Signature

BHAVAN'S COLLEGE AUTONOMOUS, ANDHERI-WEST
PRACTICAL JOURNAL

Class: TYIT **Sem: V** **Roll No.: TYIT61** **Date: 23-12-25**

Course Name: Geographic Information System (GIS) **Page no:**

Practical Number :- 03

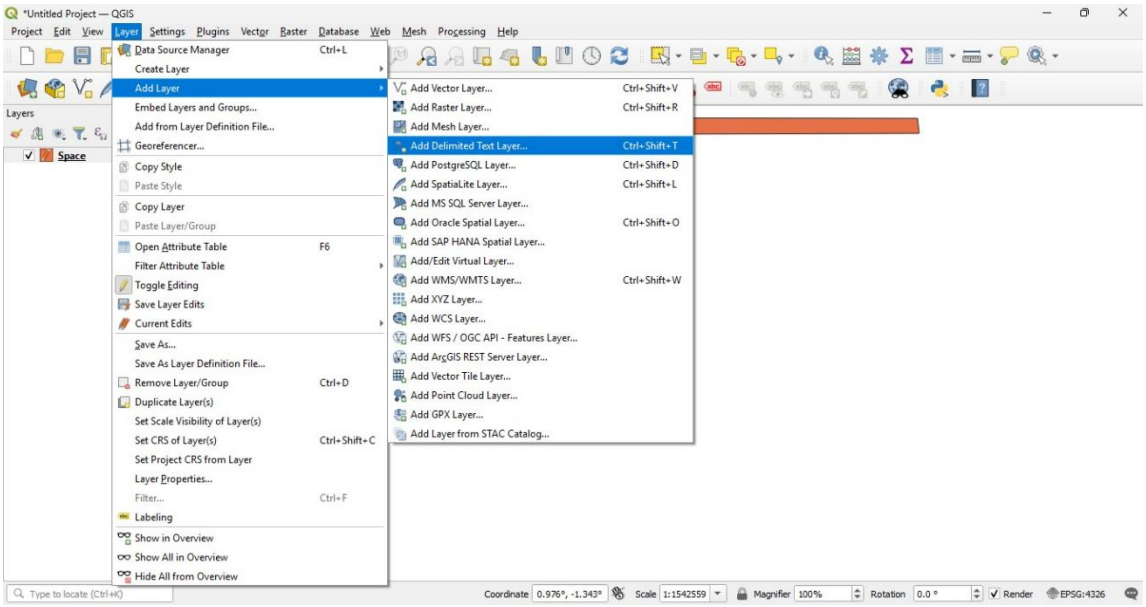

- Data Source Manager | Delimited Text window will appear
- Select the \GIS_Workshop\Practicals\Practical_03\C\Sample.csv file from data folder.

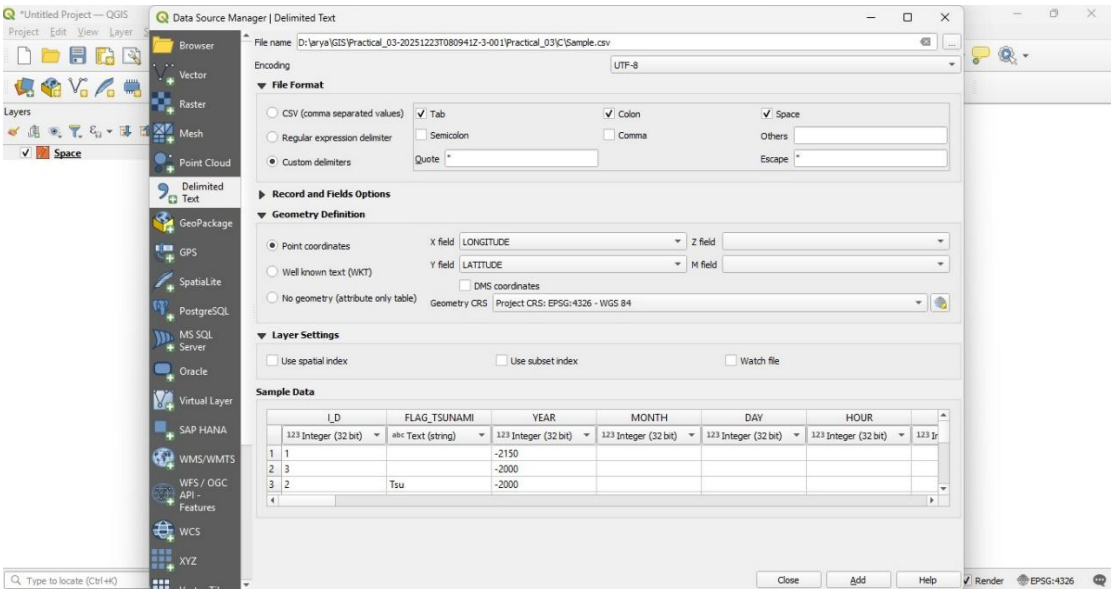

- Press ADD and close the window.
- Output:

Teacher's Signature

BHAVAN'S COLLEGE AUTONOMOUS, ANDHERI-WEST
PRACTICAL JOURNAL

Class: TYIT **Sem: V** **Roll No.: TYIT61** **Date: 23-12-25**

Course Name: Geographic Information System (GIS) **Page no:**

Practical Number :- 03

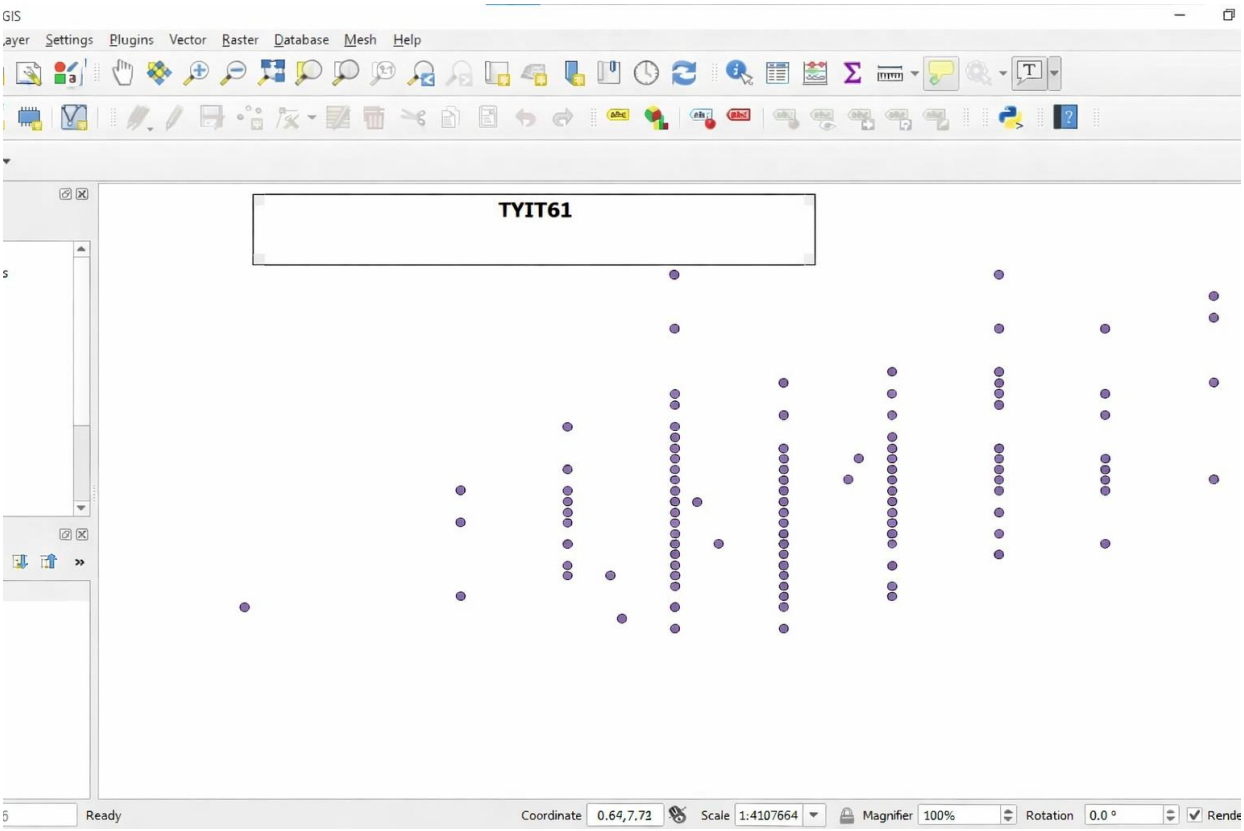

C} Using Plugins

- Core plugins are already part of the standard QGIS installation. To use these, just enable them.
- Open QGIS. Click on Plugins → Manage and Install Plugins....

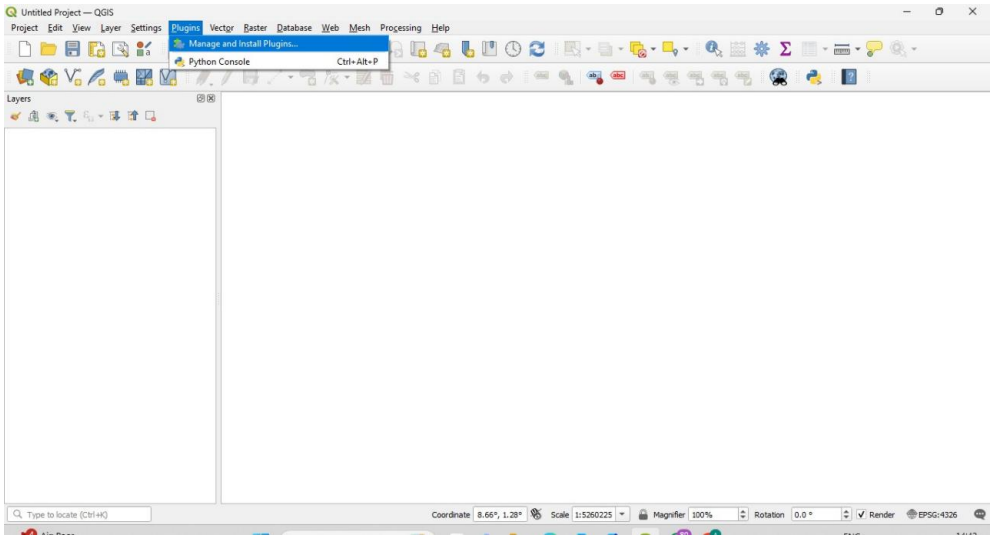

Teacher's Signature

BHAVAN'S COLLEGE AUTONOMOUS, ANDHERI-WEST
PRACTICAL JOURNAL

Class: TYIT **Sem: V** **Roll No.: TYIT61** **Date: 23-12-25**

Course Name: Geographic Information System (GIS) **Page no:**

Practical Number :- 03

- To enable a plugin, check on the checkbox next to Plugin. This will enable the plugin to use it.
- Install OSM place Search from all plugins by searching on it and OpenLayers Plugin by following the below steps.

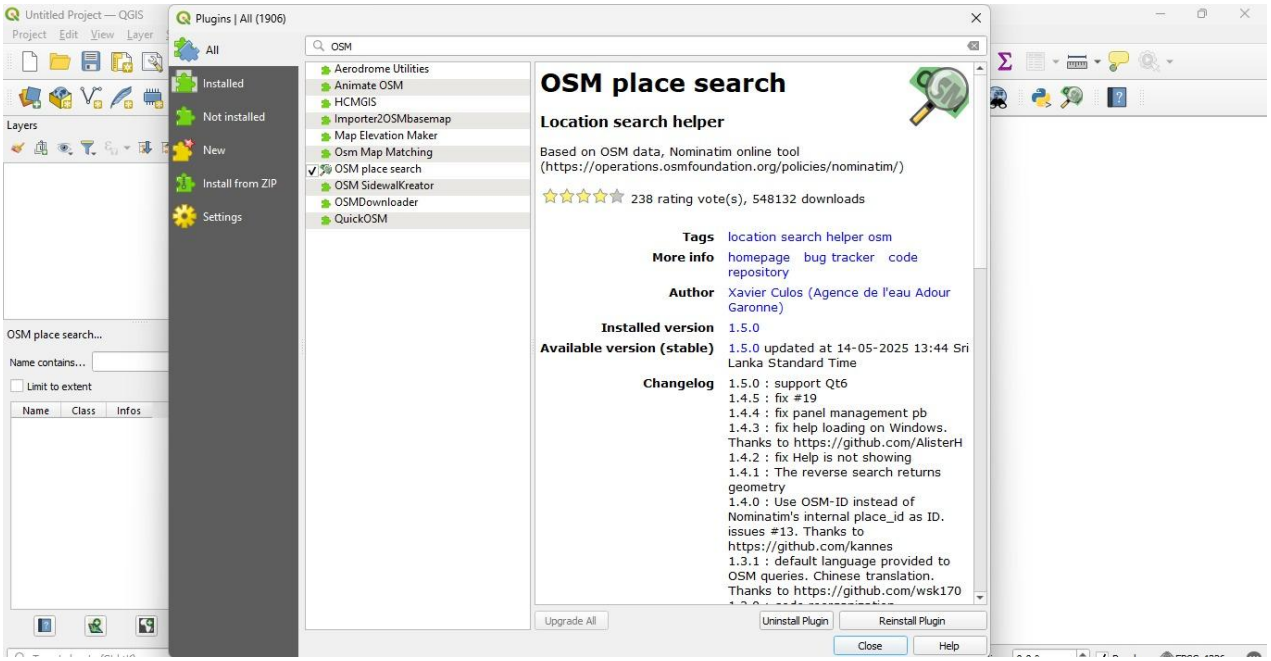

- External plugins are available in the QGIS Plugins Repository and need to be installed by the users before using them.
- Click on Not Installed or Install from ZIP.
- Once the plugin is downloaded and installed, you will see a confirmation dialog.
- Click on Plugins → <>
- The Plugin if marked Experimental plugin can be installed, from Setting→ check on or A tab will be added to Plugin Manager Window.
- Click on a plugin name and Click Install.

Teacher's Signature

BHAVAN'S COLLEGE AUTONOMOUS, ANDHERI-WEST
PRACTICAL JOURNAL

Class: TYIT **Sem: V** **Roll No.: TYIT61** **Date: 23-12-25**

Course Name: Geographic Information System (GIS) **Page no:**

Practical Number :- 03

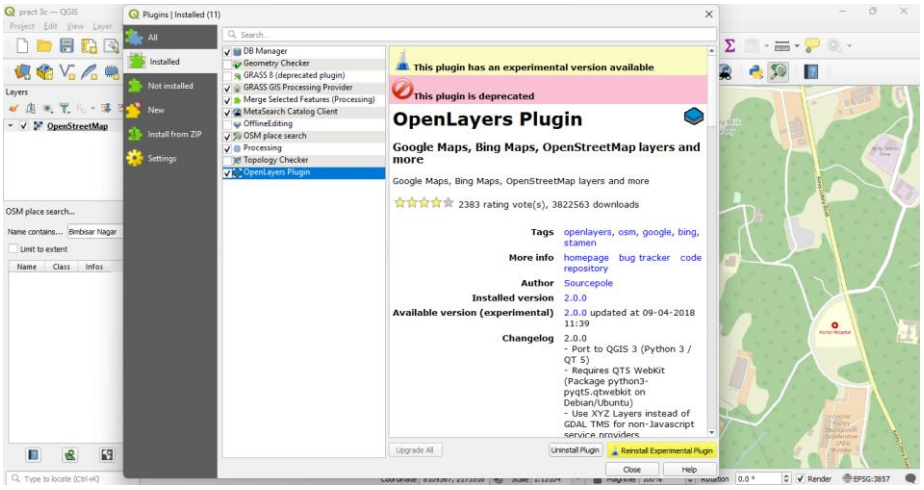

D} Searching and Downloading OpenStreetMap

Data OpenStreetMap (OSM) created by Steve Coast in the UK in 2004 is a collaborative project to create a free editable map of the world. Rather than the map itself, the data generated by the project is considered its primary output. The creation and growth of OSM has been motivated by restrictions on use or availability of map information across much of the world, and the advent of inexpensive portable satellite navigation devices.

- Add "Open Layer" and "OSM Search" Plugin from Not Installed option from Plugin Manager Dialog Box.
- The OSM Place Search plugin will install itself as a Panel in QGIS, if not go to View → Panels → select OSM Place Search.

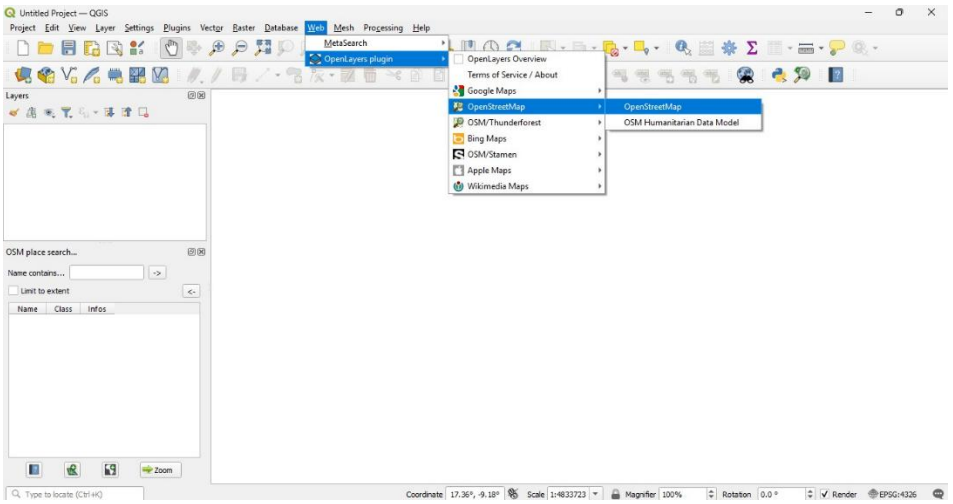

- In OSM Place search Pane → Enter Mumbai or any place name to search
- Double click on the desired place in OSM Place search Panel or Click

Teacher's Signature

BHAVAN'S COLLEGE AUTONOMOUS, ANDHERI-WEST
PRACTICAL JOURNAL

Class: TYIT **Sem: V** **Roll No.: TYIT61** **Date: 23-12-25**

Course Name: Geographic Information System (GIS) **Page no:**

Practical Number :- 03

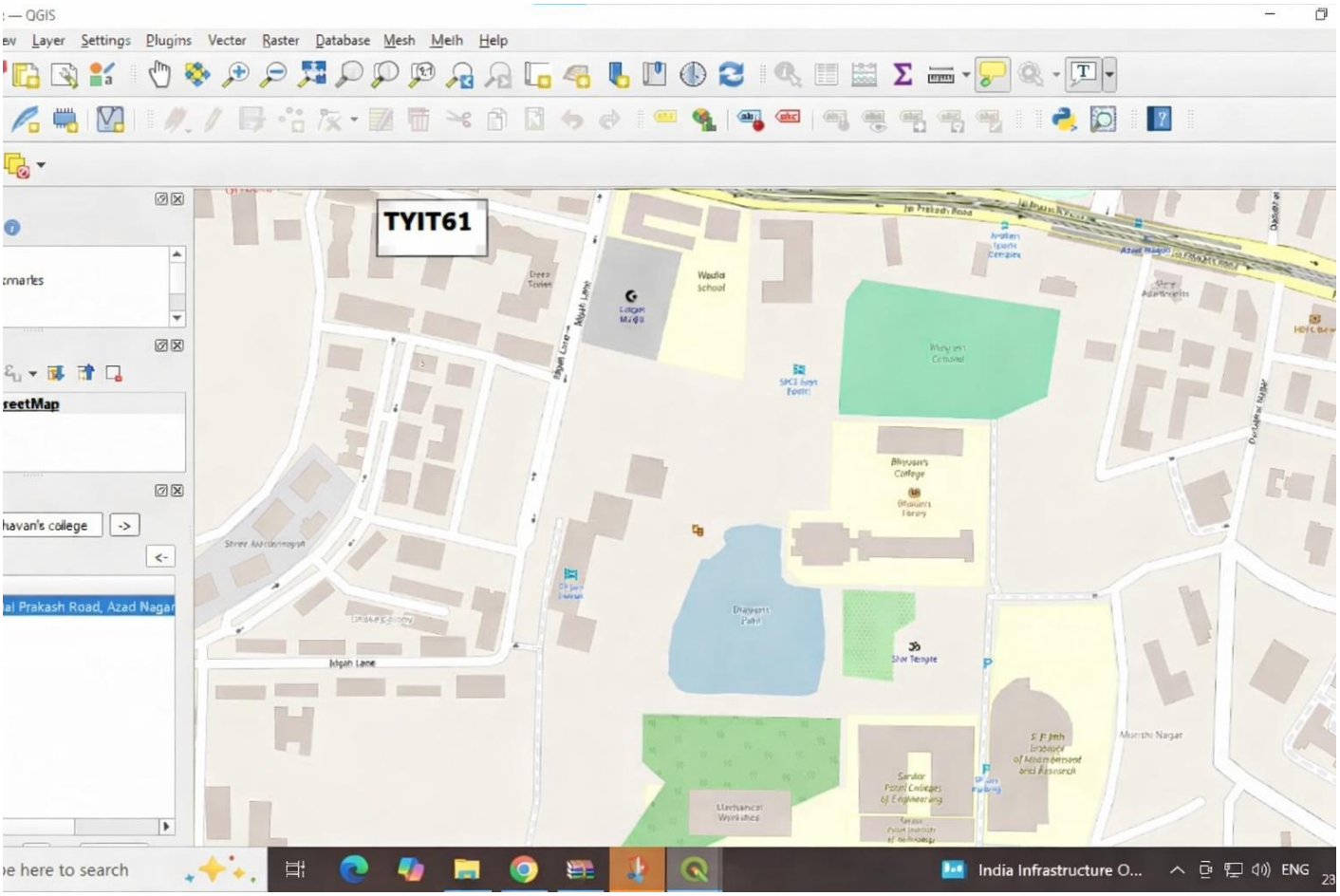

Teacher's Signature