BHAVAN'S COLLEGE AUTONOMOUS, ANDHERI-WEST
PRACTICAL JOURNAL

Class: TYIT **Sem: VI** **Roll No.: TYIT25** **Date: 21-01-2026**

Course Name: Geographic Information System (GIS) **Page no:**

Practical Number:- 05

Q. Working with Projections and WMS Data

- Start a new Project.
- Layer → Add Layer →Vector Layer
- Select "ne_10m_admin_0_countries.zip" Layer from data folder.
- Go to Layer → Save As Select format as ESRI Shape File Select folder location and file name Set CRS North_America_Albers_Equal_Area_Conic EPSG: 102008

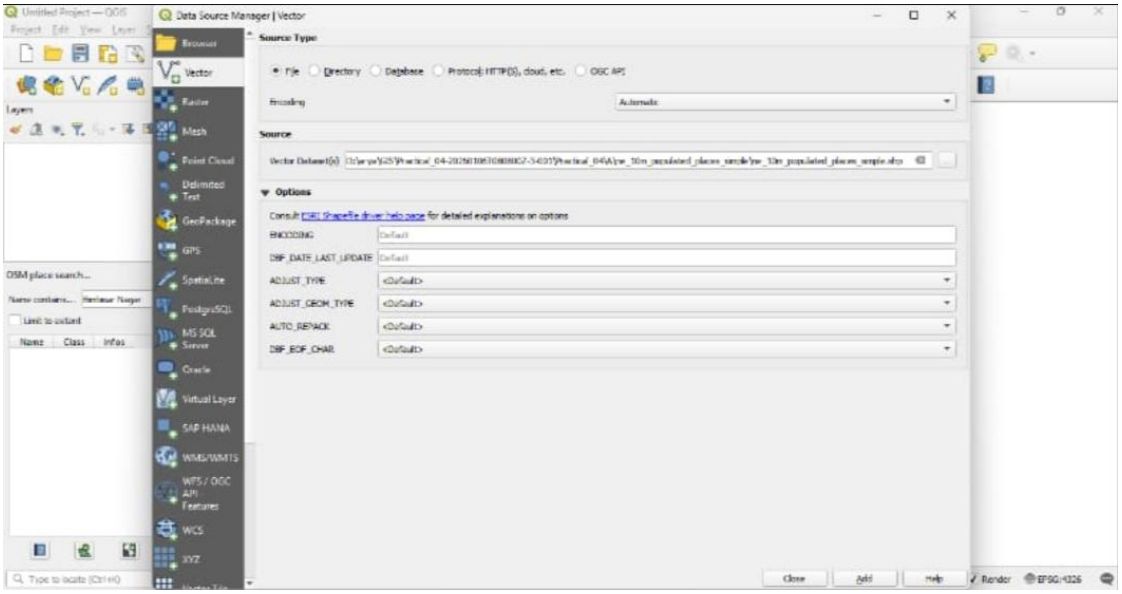

- Press "OK".
- Deselect the original Image and keep the projected layer visible

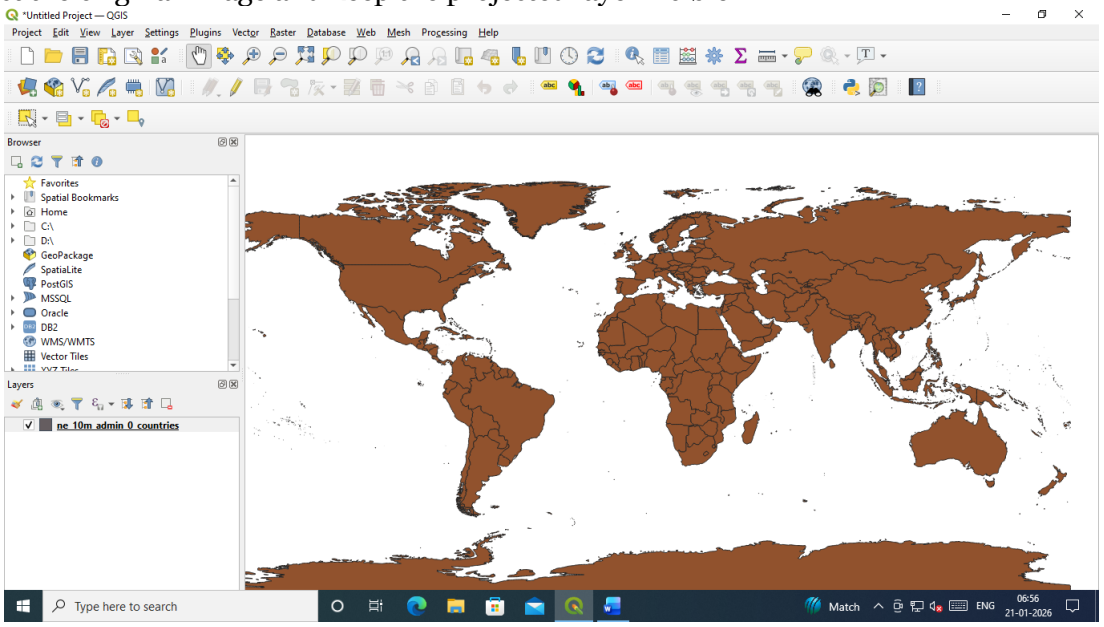

Teacher's Signature

BHAVAN'S COLLEGE AUTONOMOUS, ANDHERI-WEST
PRACTICAL JOURNAL

Class: TYIT **Sem: VI** **Roll No.: TYIT25** **Date: 21-01-2026**

Course Name: Geographic Information System (GIS) **Page no:**

Practical Number:- 05

- Select Layer → Add Layer → Add Raster Layer → Select MiniScale_(standard)_R17.tif from Location
- "GIS_Workshop\Practicals\Practical_05\DATA\minisc_gb\minisc_gb\data\RGB_TIF_compressed\MiniScale_(standard)_R17.tif"
- The Layer appears on a different location than the location where Great Britain is shown on Map

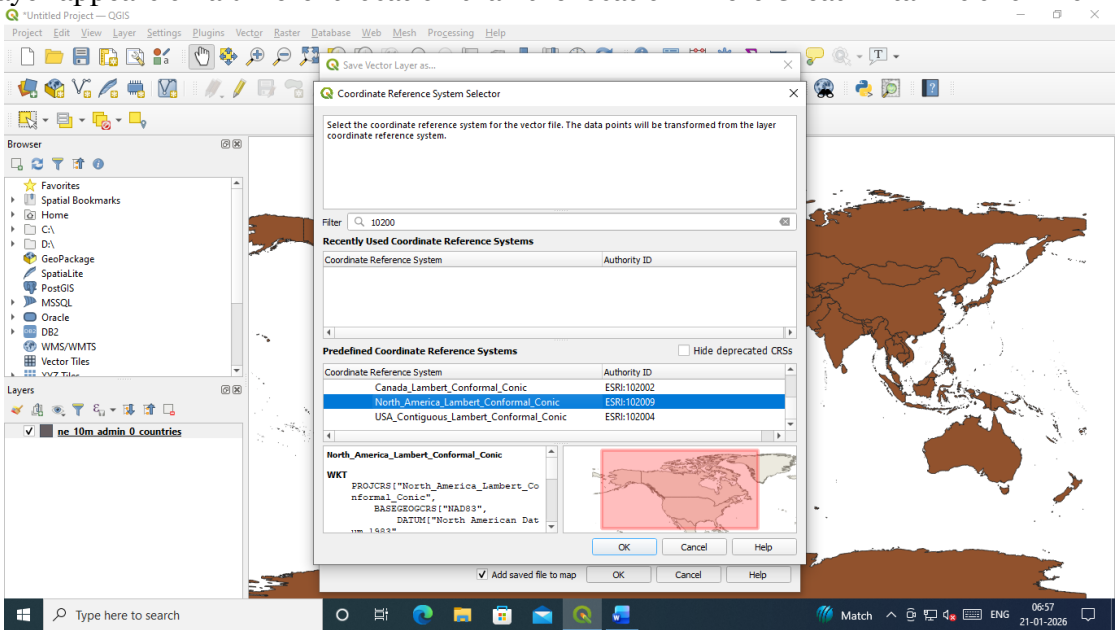

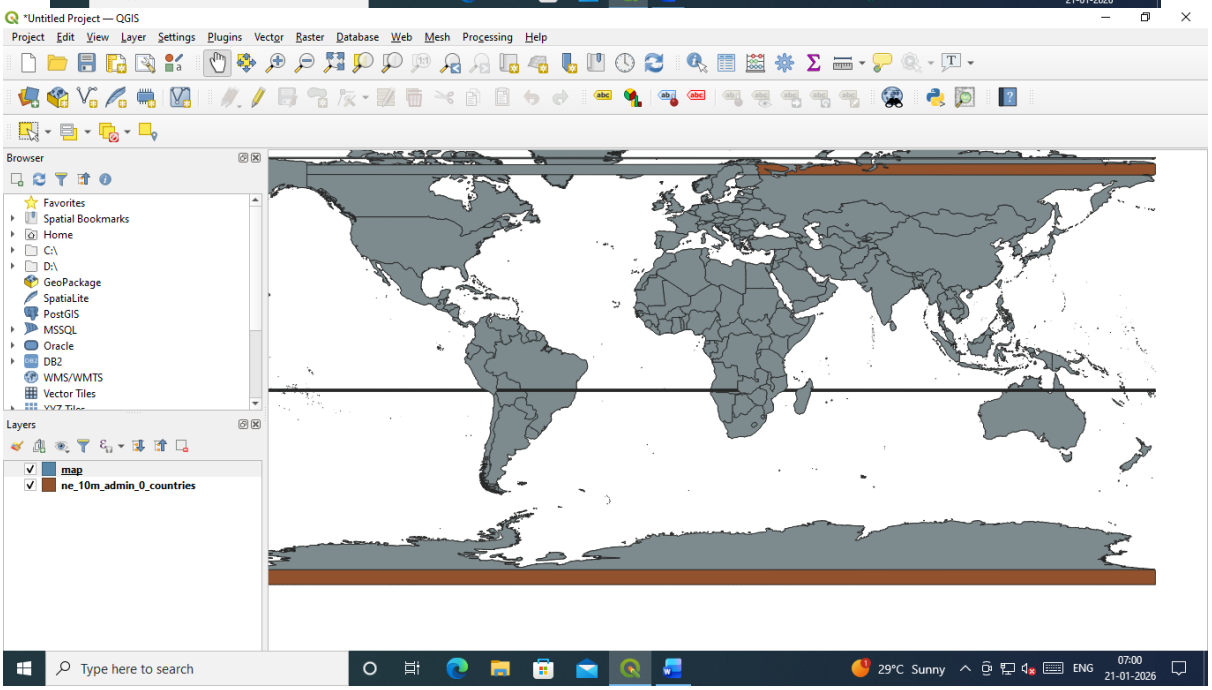

- Open Layer Properties→CRS → Search bri → select British National Grid EPSG 27700.
- Processing may take some time.
- Locate United Kingdom on Layer; the vector layer exactly coincides by the raster layer covering United Kingdom.

Teacher's Signature

BHAVAN'S COLLEGE AUTONOMOUS, ANDHERI-WEST
PRACTICAL JOURNAL

Class: TYIT **Sem: VI** **Roll No.: TYIT25** **Date: 21-01-2026**

Course Name: Geographic Information System (GIS) **Page no:**

Practical Number:- 05

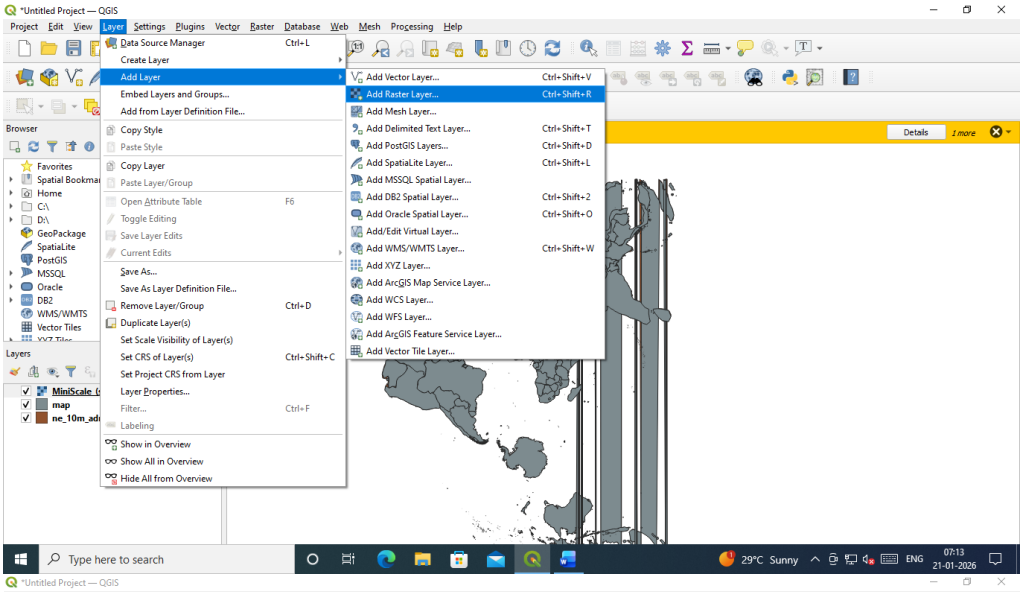

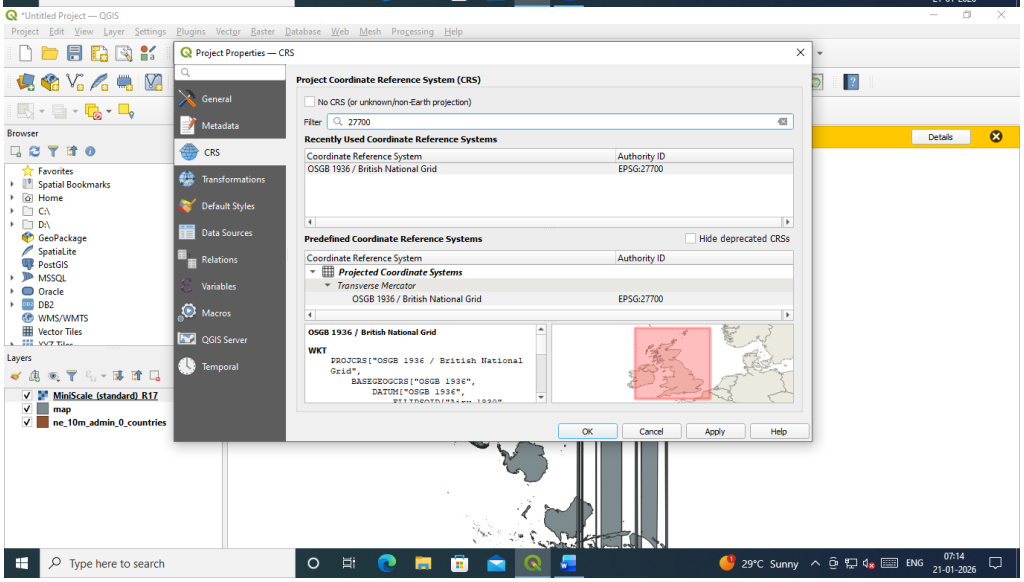

Teacher's Signature

BHAVAN'S COLLEGE AUTONOMOUS, ANDHERI-WEST
PRACTICAL JOURNAL

Class: TYIT **Sem: VI** **Roll No.: TYIT25** **Date: 21-01-2026**

Course Name: Geographic Information System (GIS) **Page no:**

Practical Number:- 05

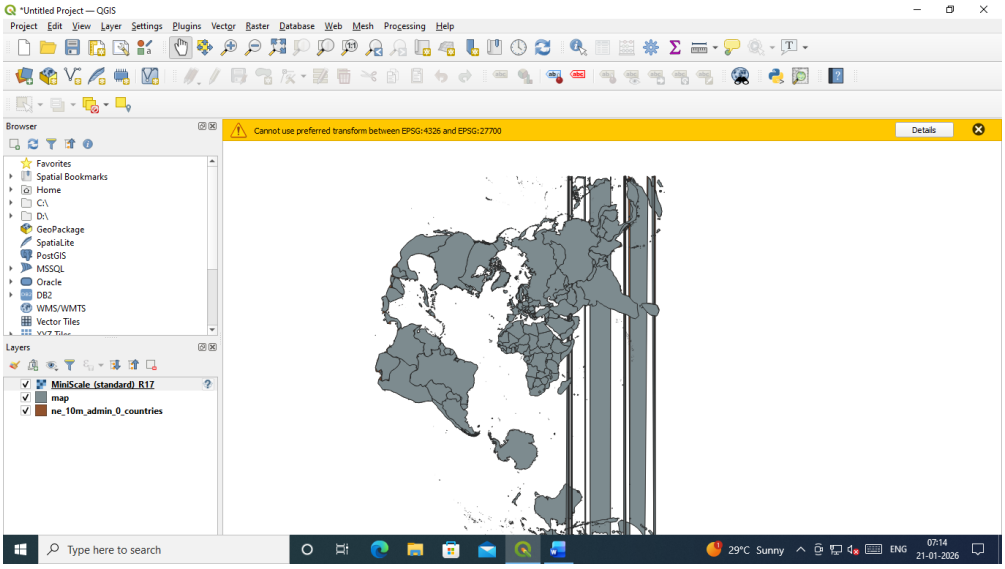

Teacher's Signature