BHAVAN'S COLLEGE AUTONOMOUS, ANDHERI-WEST
PRACTICAL JOURNAL

Class: TYIT **Sem: VI** **Roll No.: TYIT25** **Date: 04-02-2026**

Course Name: Geographic Information System (GIS) **Page no:**

Practical Number:- 07

Q] Managing Data Tables and Spatial Data Sets:

A. Table joins

- Start a new project
- Go to Layer → Add Layer → Add new Vector Layer "I:\GIS_Workshop\Practicals\Practical_07\A\Data\tl_2013_06_tract.zip"

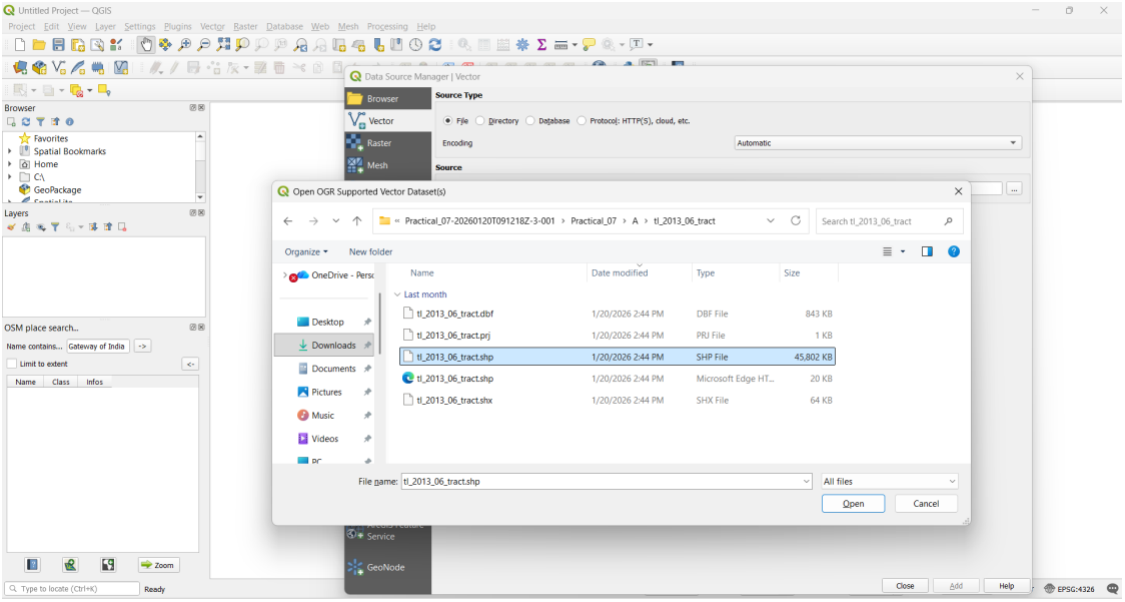

- Go to Layer → Add Layer → Add Delimited Text Layer And add I:\GIS_Workshop\Practicals\Practical_07\A\Data\ca_tacts_pop.csv"

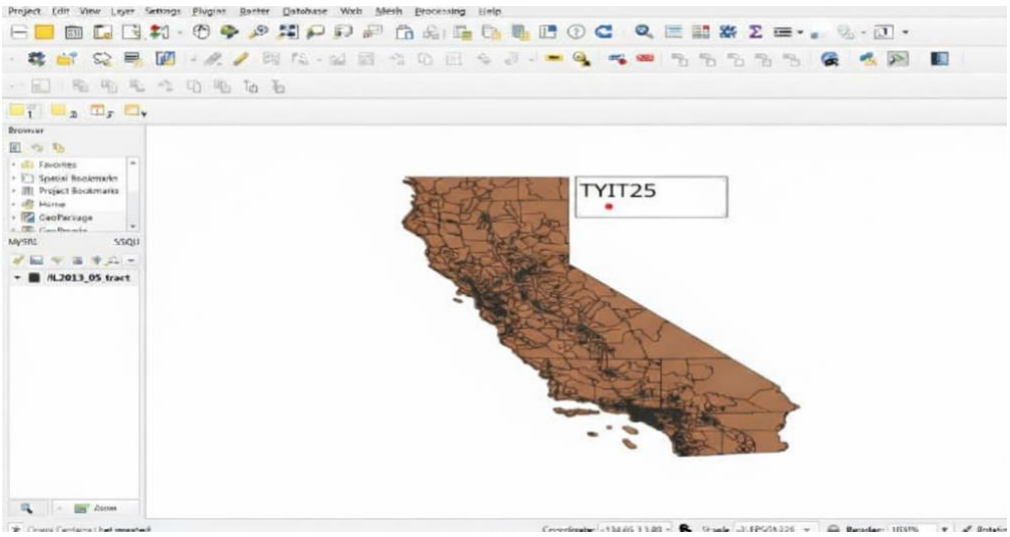

Teacher's Signature

BHAVAN'S COLLEGE AUTONOMOUS, ANDHERI-WEST
PRACTICAL JOURNAL

Class: TYIT **Sem: VI** **Roll No.: TYIT25** **Date: 04-02-2026**

Course Name: Geographic Information System (GIS) **Page no:**

Practical Number:- 07

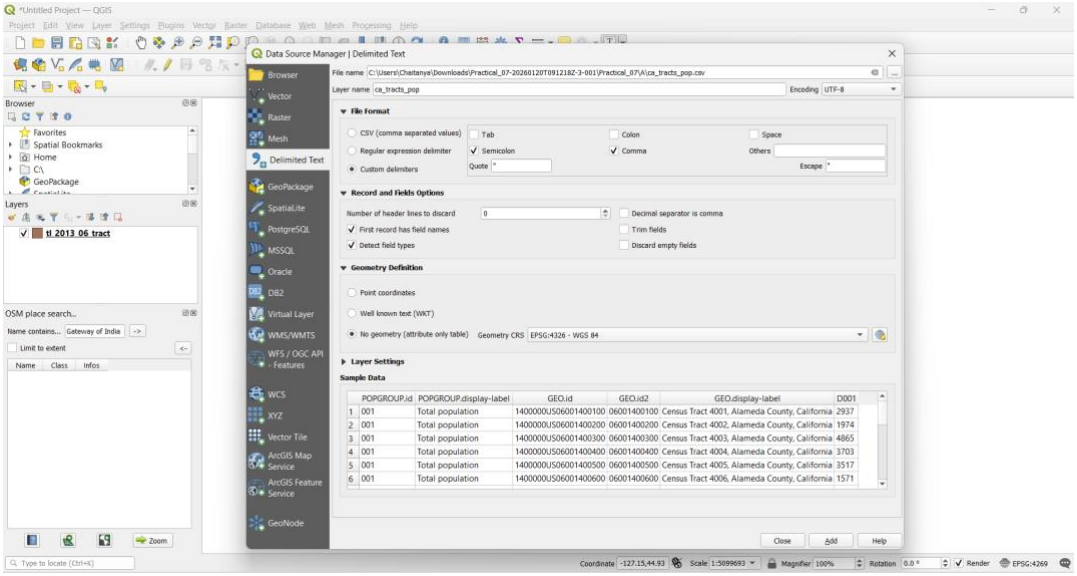

- In the layer panel, Right click on "tl_2013_06_tract", layer and select Properties
- Select the JOIN option in Properties, and click on "+" button to add new table join.
- In the Add Vector Join window set the following properties and click OK.

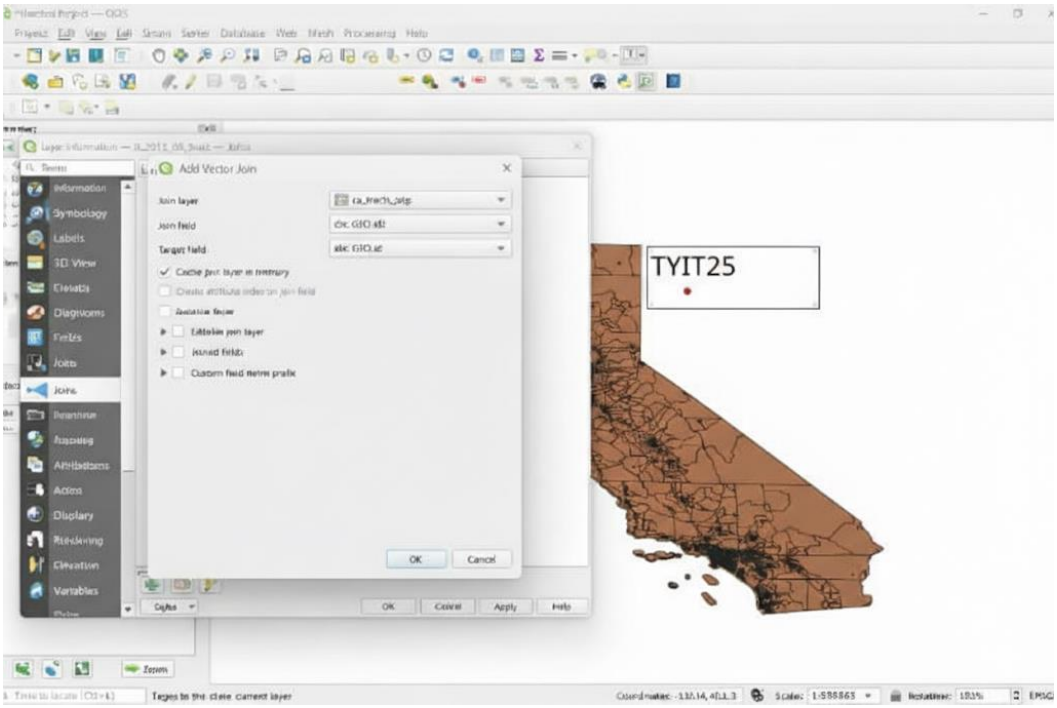

- After performing join

Teacher's Signature

BHAVAN'S COLLEGE AUTONOMOUS, ANDHERI-WEST
PRACTICAL JOURNAL

Class: TYIT **Sem: VI** **Roll No.: TYIT25** **Date: 04-02-2026**

Course Name: Geographic Information System (GIS) **Page no:**

Practical Number:- 07

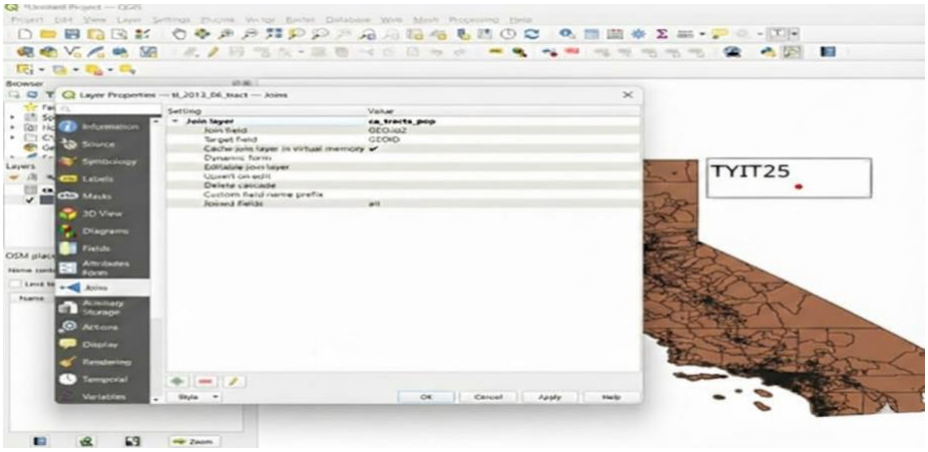

- For more clear output, select "tl_2013_06_tact" from Layer Panel, right click and select properties. Go to Symbology and set the following properties.

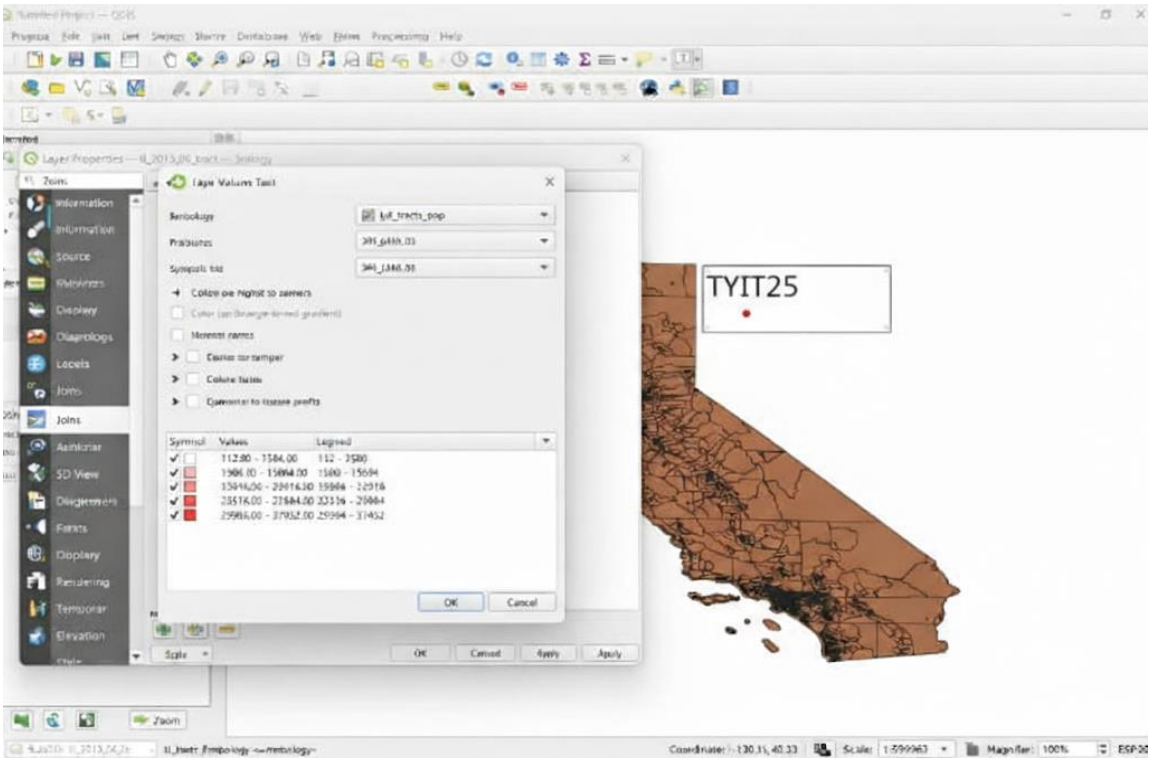

- A detailed and accurate population map of California can be seen as the result. Same technique can be used to create maps based on variety of census data.
- Here is The Output:

Teacher's Signature

BHAVAN'S COLLEGE AUTONOMOUS, ANDHERI-WEST
PRACTICAL JOURNAL

Class: TYIT **Sem: VI** **Roll No.: TYIT25** **Date: 04-02-2026**

Course Name: Geographic Information System (GIS) **Page no:**

Practical Number:- 07

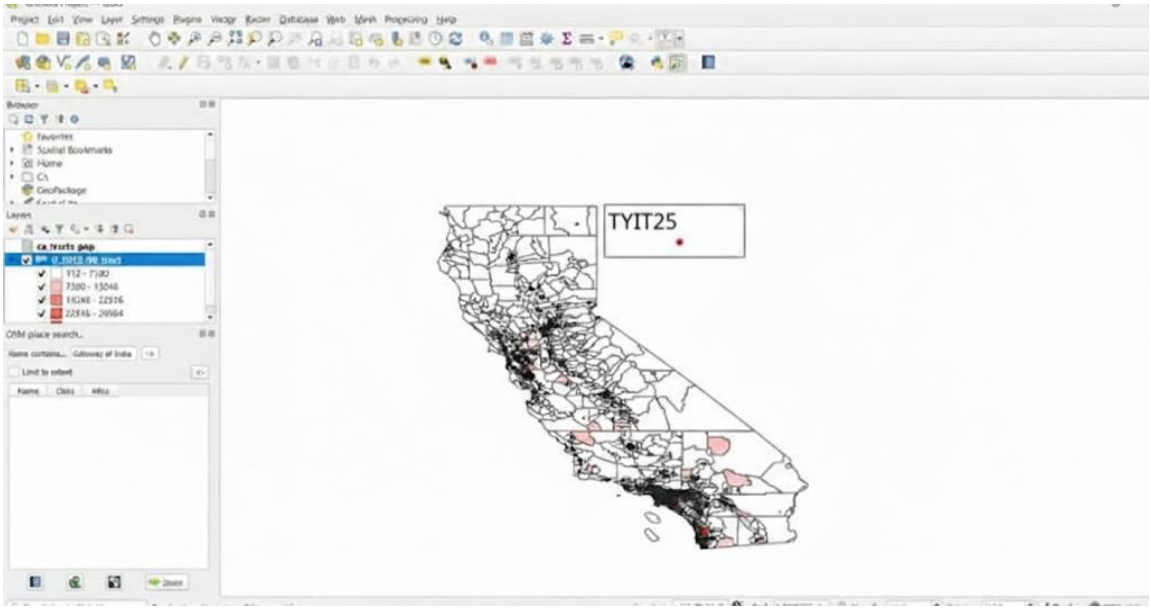

Teacher's Signature

BHAVAN'S COLLEGE AUTONOMOUS, ANDHERI-WEST
PRACTICAL JOURNAL

Class: TYIT **Sem: VI** **Roll No.: TYIT25** **Date: 04-02-2026**

Course Name: Geographic Information System (GIS) **Page no:**

Practical Number:- 07

B. Spatial Joins:

- Go to Layer → Add Layer → Add Vector Layer → Select "I:\GIS_Workshop\Practicals\Practical_07\B\Data\nybb_12c\nybb_13c_av\nybb.shp" and "I:\GIS_Workshop\Practicals\Practical_07\B\Data\OEM_NursingHomes_001\OEM_NursingHomes_001.shp", from data folder.

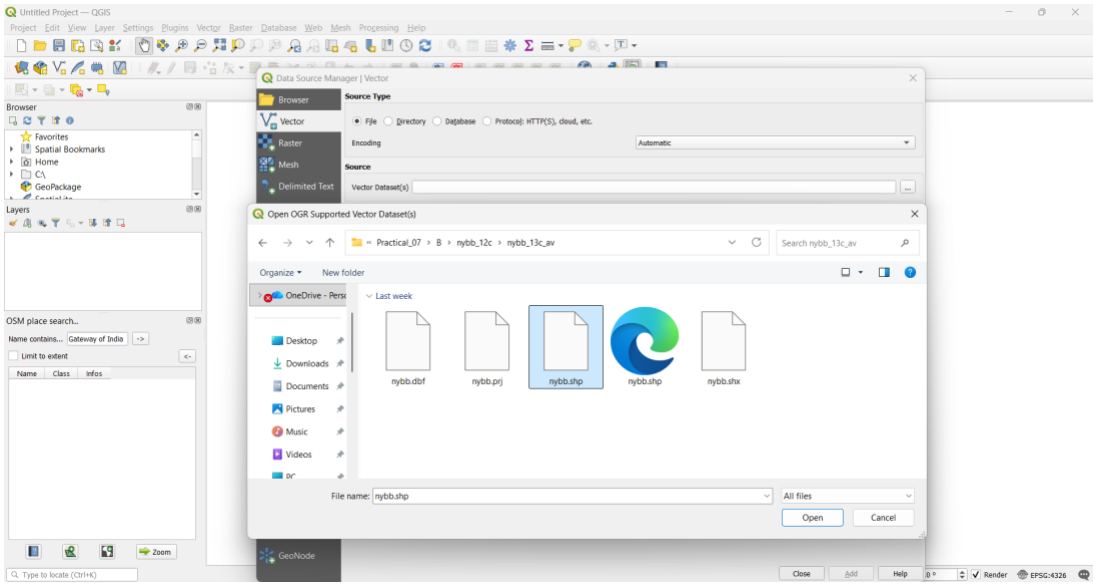

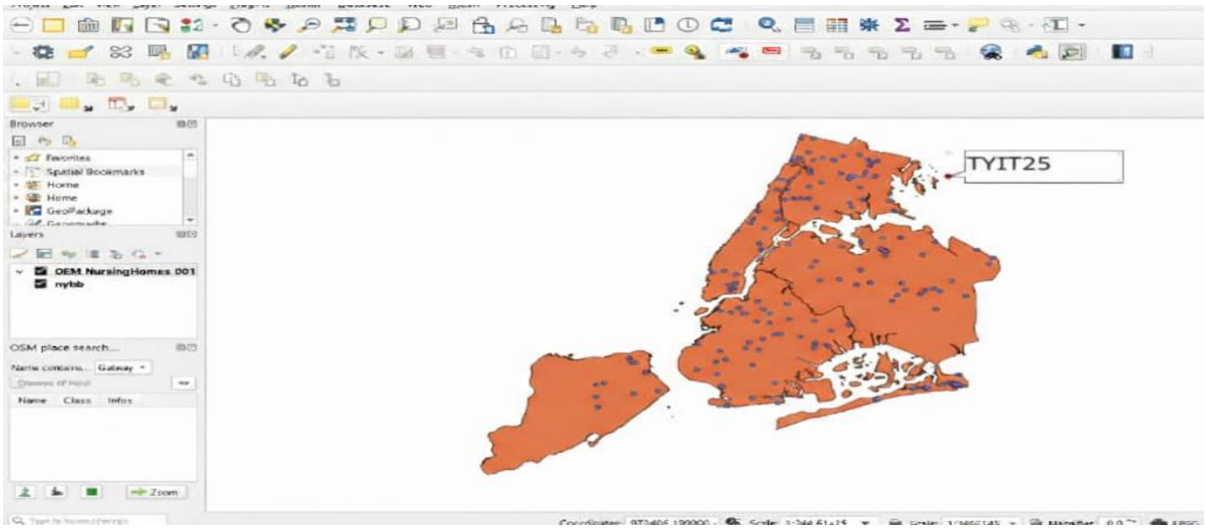

- Go to Vector → Data Management Tools → Join Attributes by Location

Teacher's Signature

BHAVAN'S COLLEGE AUTONOMOUS, ANDHERI-WEST
PRACTICAL JOURNAL

Class: TYIT **Sem: VI** **Roll No.: TYIT25** **Date: 04-02-2026**

Course Name: Geographic Information System (GIS) **Page no:**

Practical Number:- 07

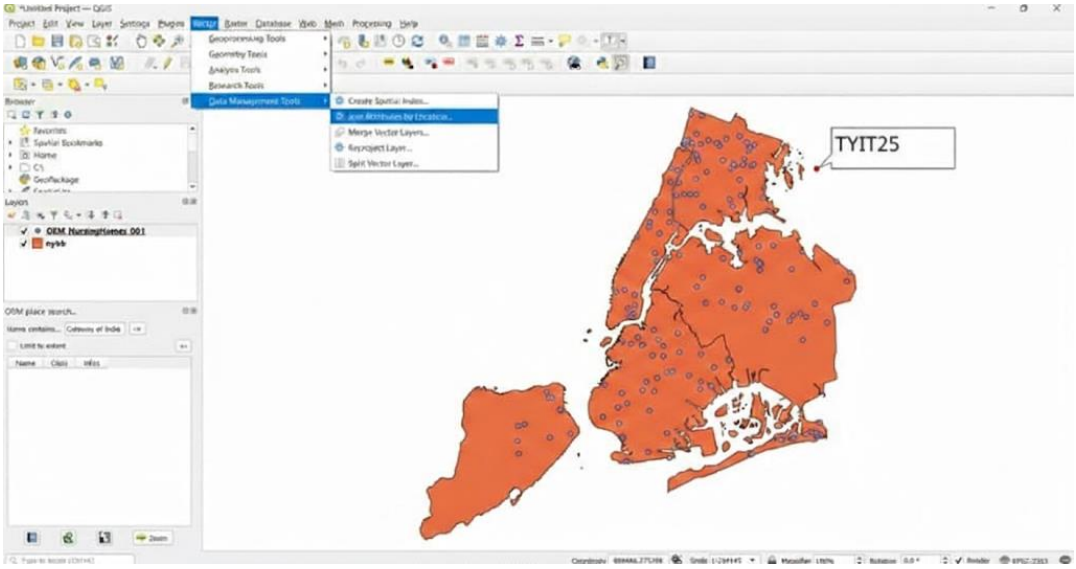

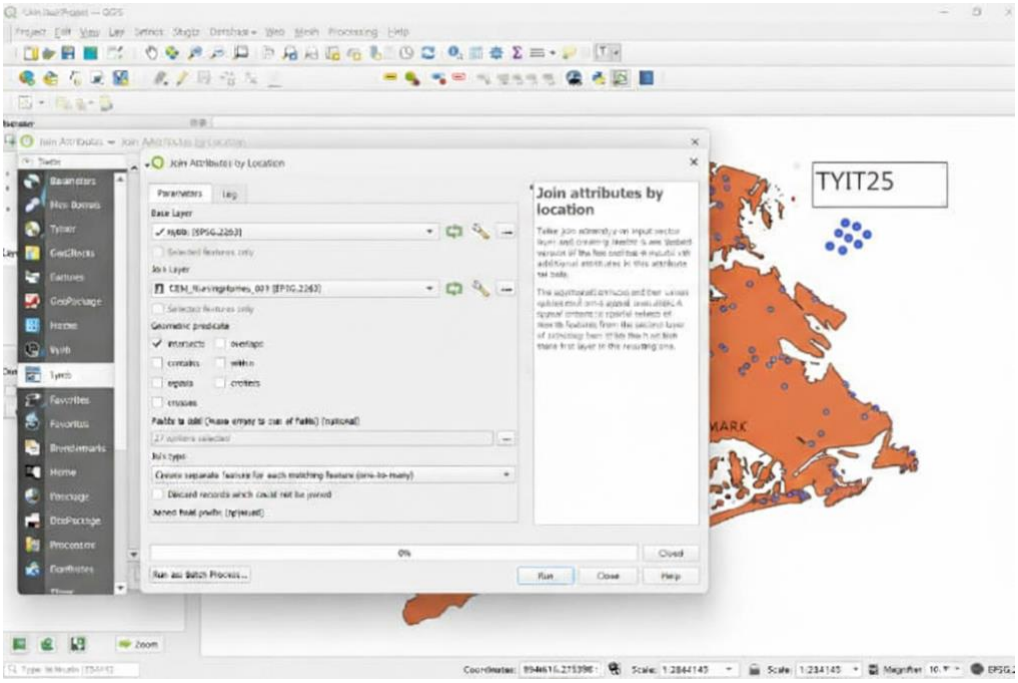

- Click on the three dots: Fields to select: select all

Teacher's Signature

BHAVAN'S COLLEGE AUTONOMOUS, ANDHERI-WEST
PRACTICAL JOURNAL

Class: TYIT **Sem: VI** **Roll No.: TYIT25** **Date: 04-02-2026**

Course Name: Geographic Information System (GIS) **Page no:**

Practical Number:- 07

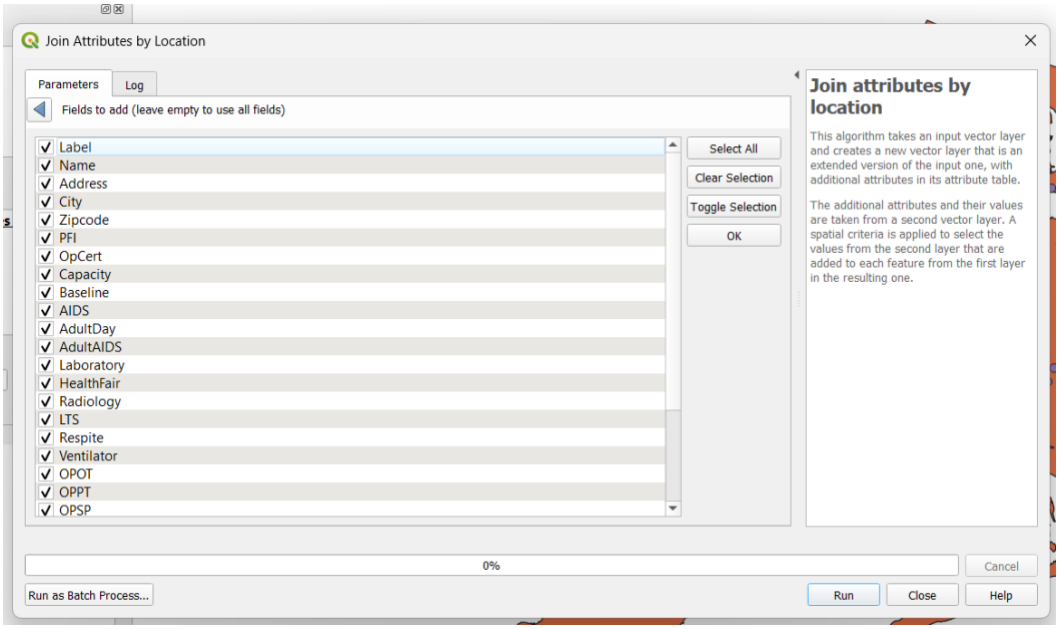

- Use the Identify Feature Button to select a region to view join data on map Layer.

Output:

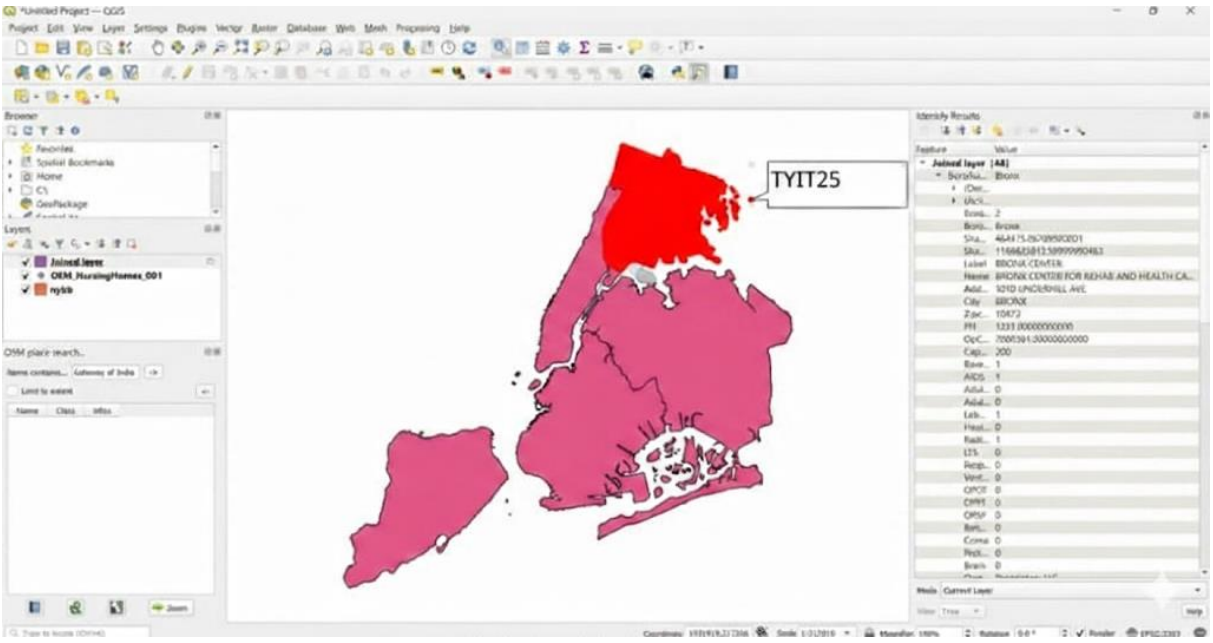

Teacher's Signature

BHAVAN'S COLLEGE AUTONOMOUS, ANDHERI-WEST
PRACTICAL JOURNAL

Class: TYIT **Sem: VI** **Roll No.: TYIT25** **Date: 04-02-2026**

Course Name: Geographic Information System (GIS) **Page no:**

Practical Number:- 07

C. Points in polygon analysis

- Points in polygon analysis
- Go to Layer → Add Layer → Add Delimited Text Layer Select "EarthQuakeDatabase.txt.

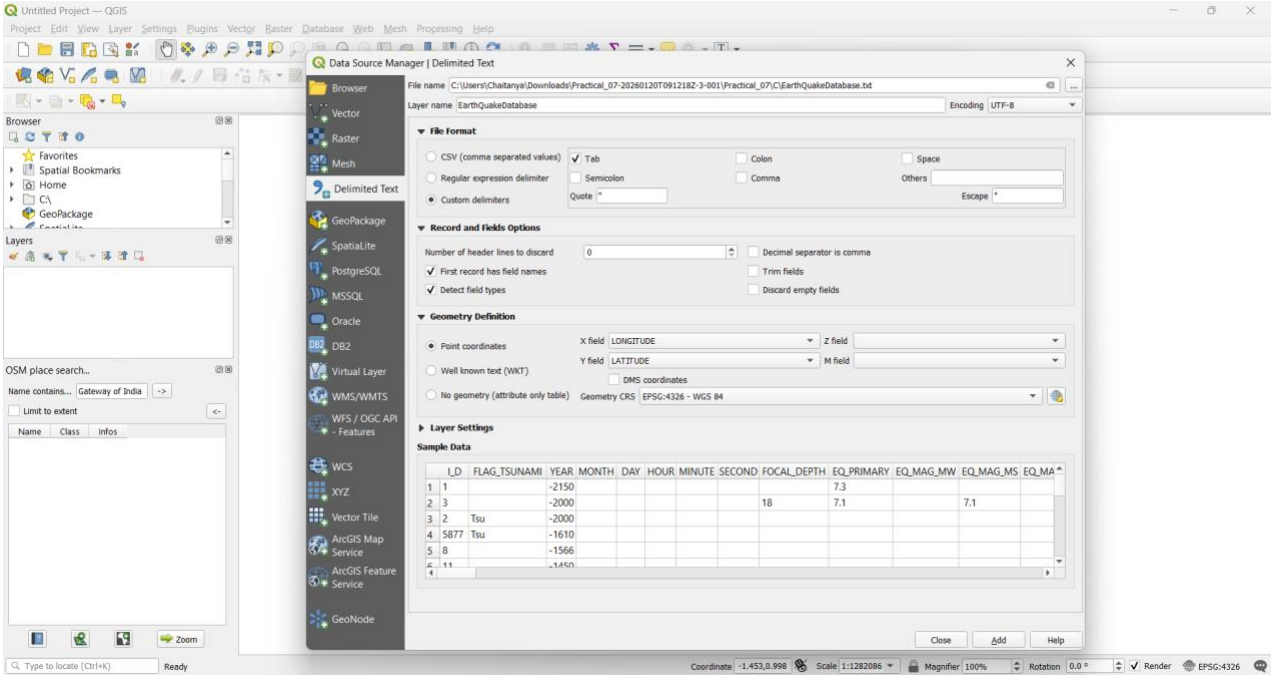

- Go to Layer → Add Layer → Add Vector Layer "I:\GIS_Workshop\Practicals\Practical_07\C\Data\ne_10m_admin_0_countries.zip"

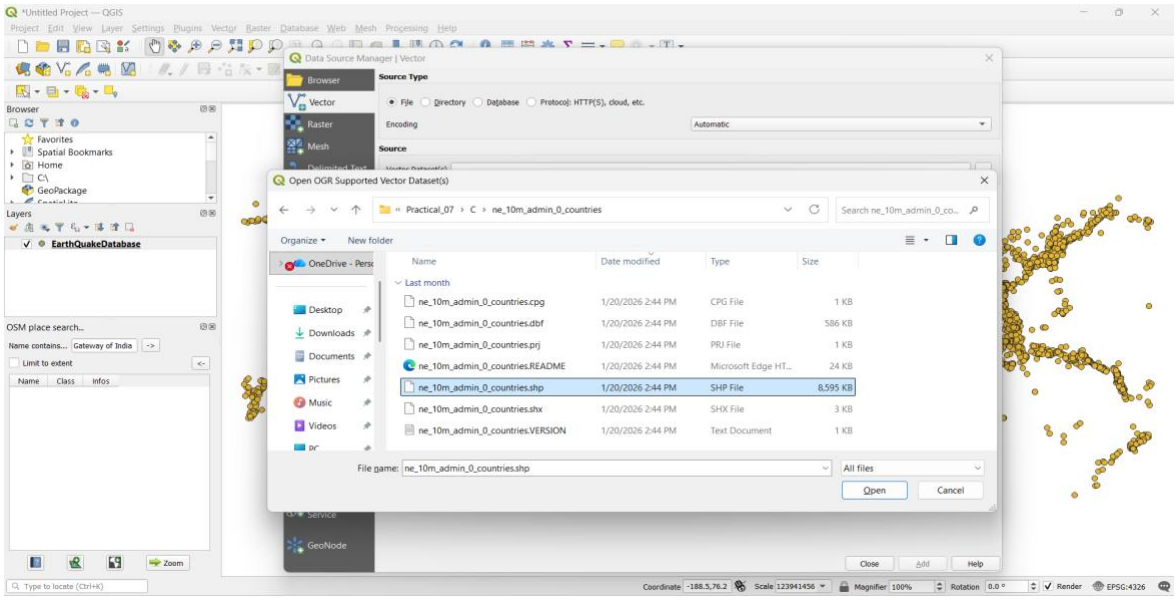

Teacher's Signature

BHAVAN'S COLLEGE AUTONOMOUS, ANDHERI-WEST
PRACTICAL JOURNAL

Class: TYIT **Sem: VI** **Roll No.: TYIT25** **Date: 04-02-2026**

Course Name: Geographic Information System (GIS) **Page no:**

Practical Number:- 07

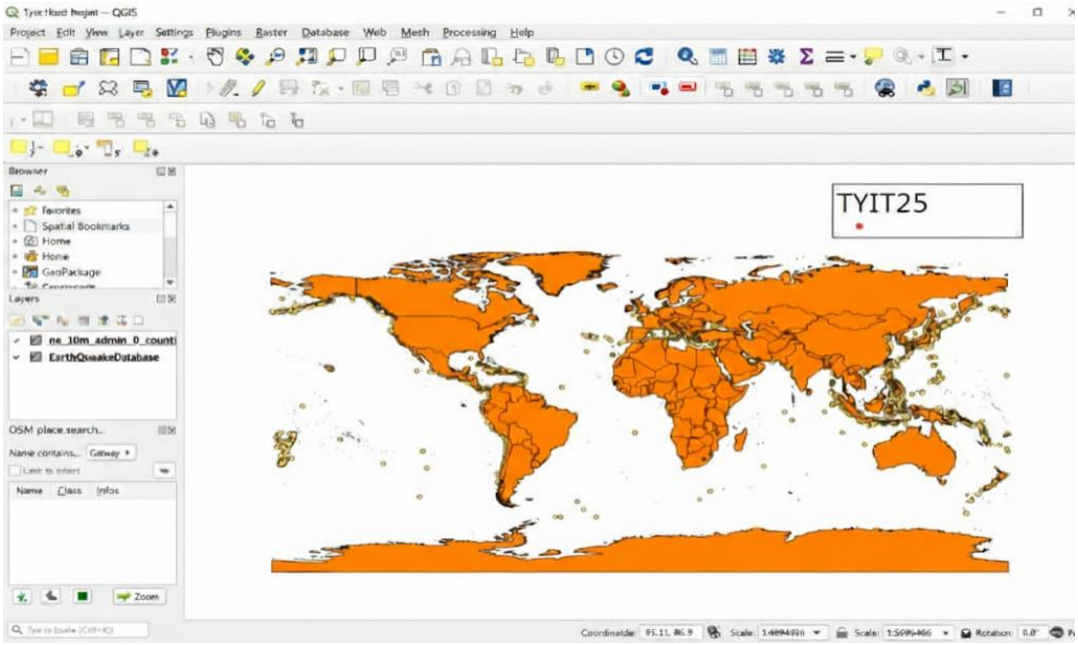

- Go to Analysis Tools -> Count Points in Polygon

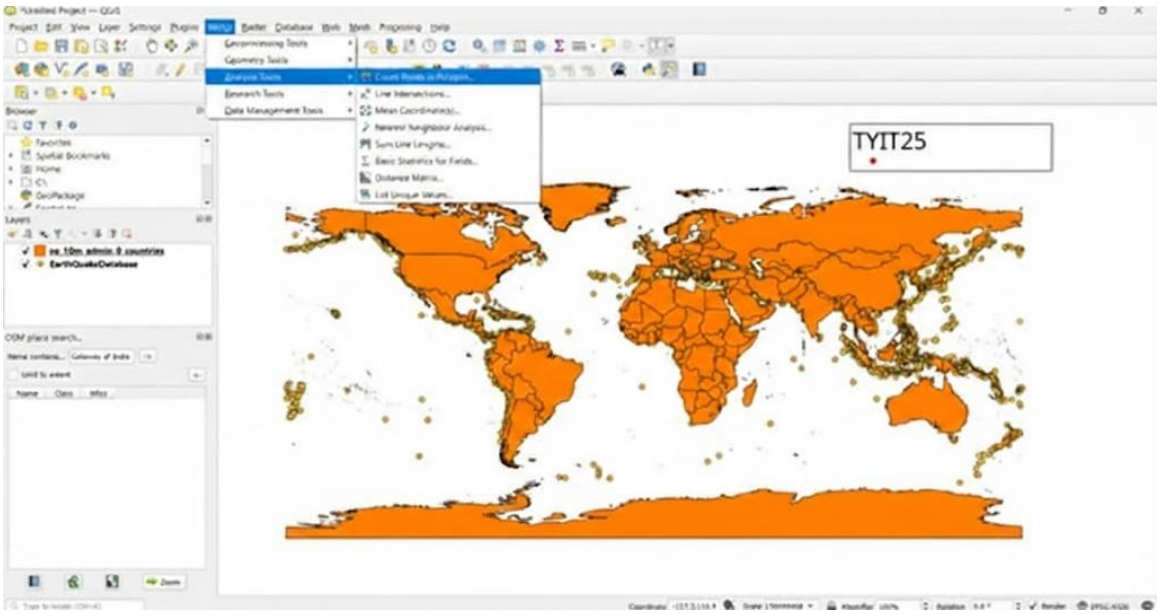

- Make the Following Changes in the tab

Teacher's Signature

BHAVAN'S COLLEGE AUTONOMOUS, ANDHERI-WEST
PRACTICAL JOURNAL

Class: TYIT **Sem: VI** **Roll No.: TYIT25** **Date: 04-02-2026**

Course Name: Geographic Information System (GIS) **Page no:**

Practical Number:- 07

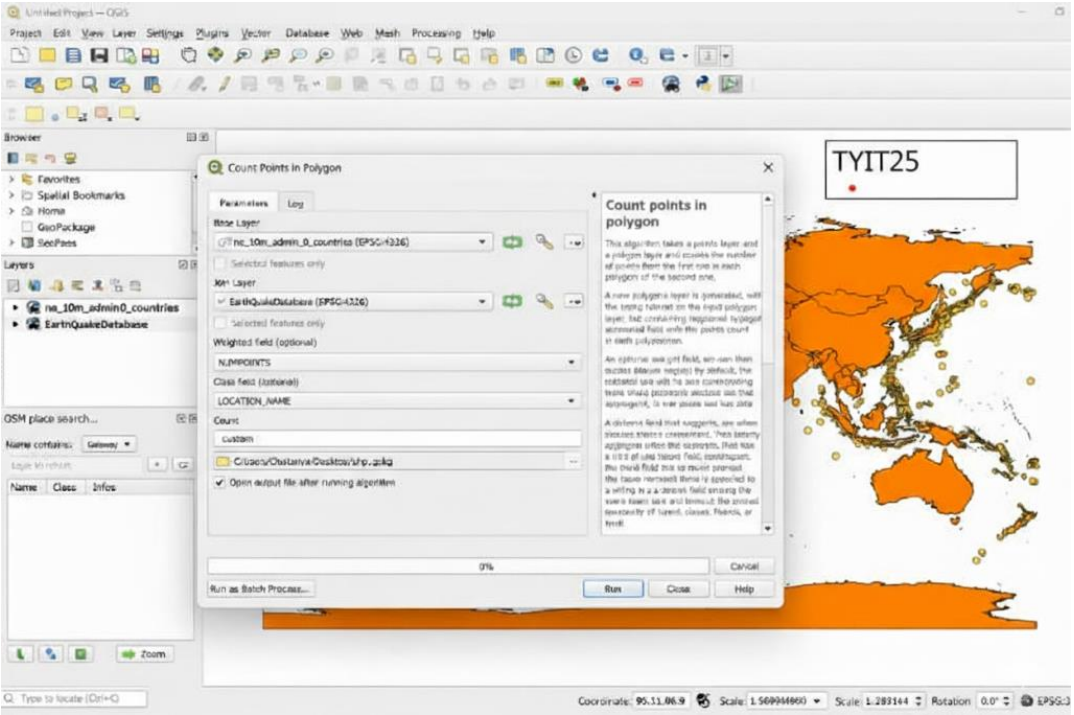

- A new Layer will be added.

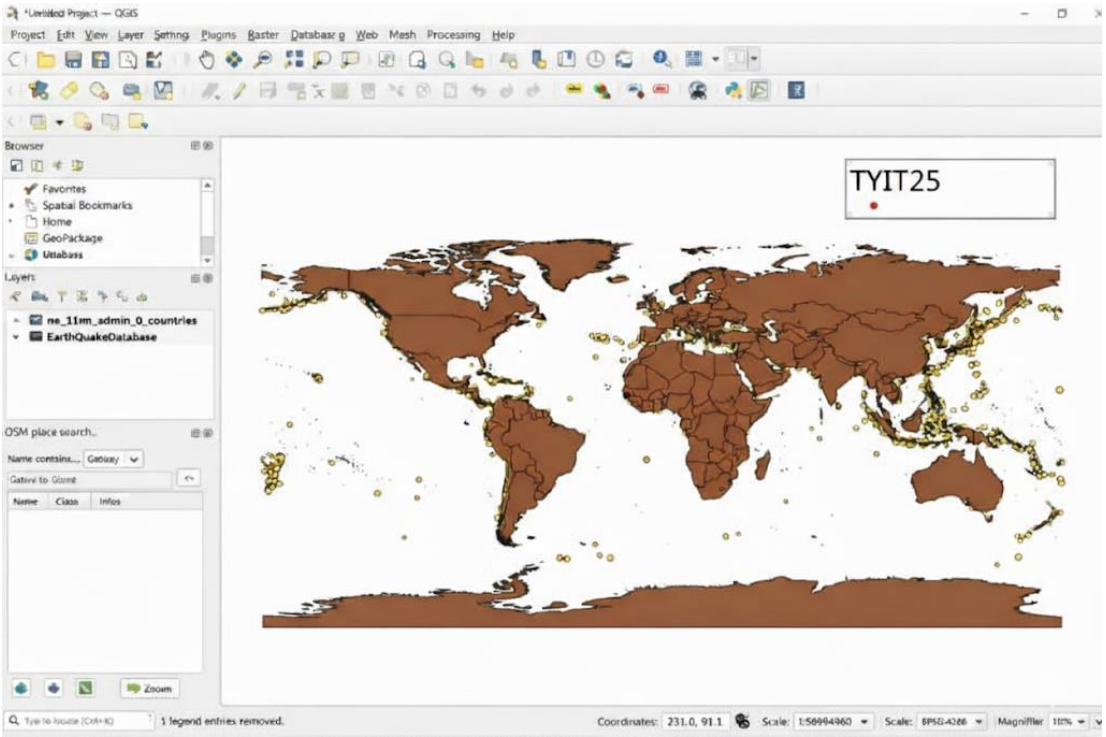

Teacher's Signature

BHAVAN'S COLLEGE AUTONOMOUS, ANDHERI-WEST
PRACTICAL JOURNAL

Class: TYIT **Sem: VI** **Roll No.: TYIT25** **Date: 04-02-2026**

Course Name: Geographic Information System (GIS) **Page no:**

Practical Number:- 07

- Go to the information buttons -> Click on a location on map

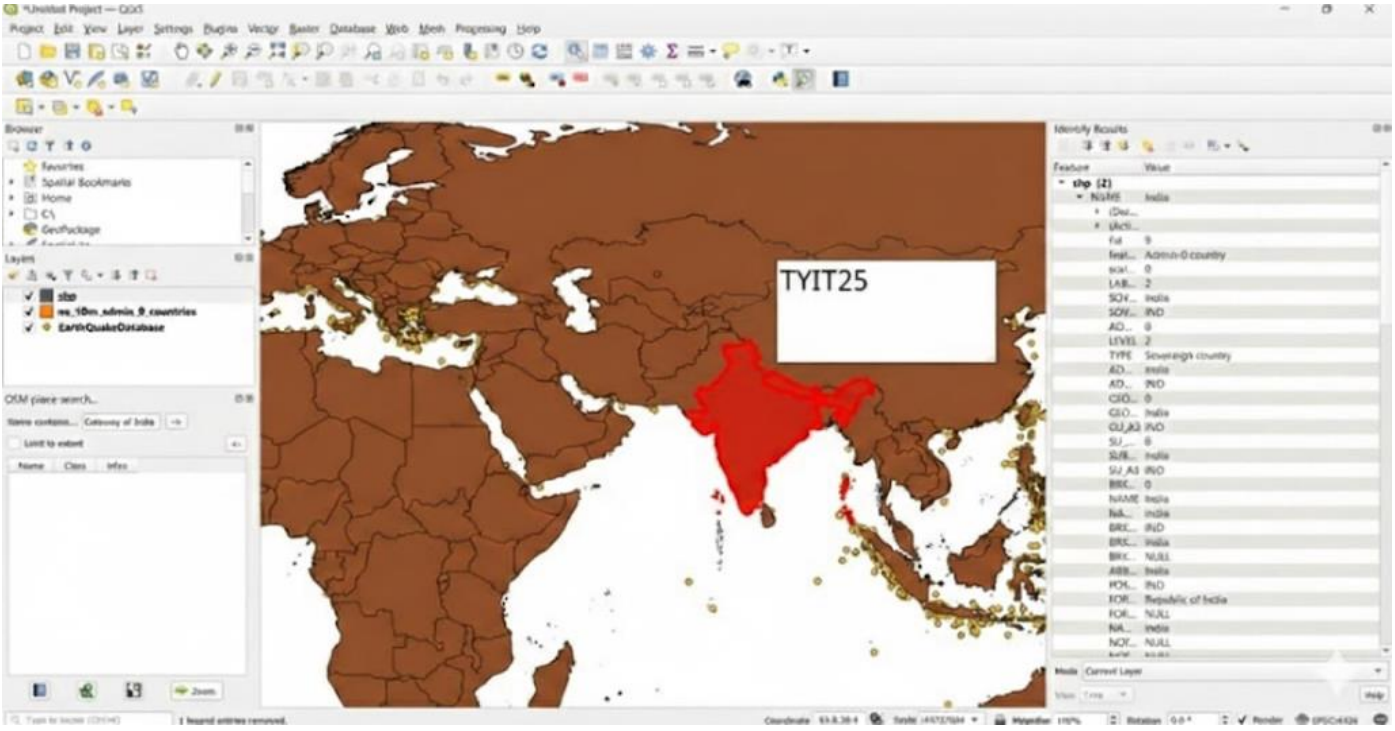

Teacher's Signature

BHAVAN'S COLLEGE AUTONOMOUS, ANDHERI-WEST
PRACTICAL JOURNAL

Class: TYIT **Sem: VI** **Roll No.: TYIT25** **Date: 04-02-2026**

Course Name: Geographic Information System (GIS) **Page no:**

Practical Number:- 07

D. Performing spatial queries

- Use the select Feature button to check country wise counting of Earthquakes.
- Performing spatial queries
- Go to Layer → Add Layer → Add Vector Layer and load "\GIS_Workshop\Practicals\Practical_07\D\Data\ne_10m_populated_places_simple\ne_10m_populated_places_simple.shp" and "I:\GIS_Workshop\Practicals\Practical_07\D\Data\ne_10m_rivers_lake_centerlines\ne_10m_rivers_lake_centerlines.shp" from project data folder

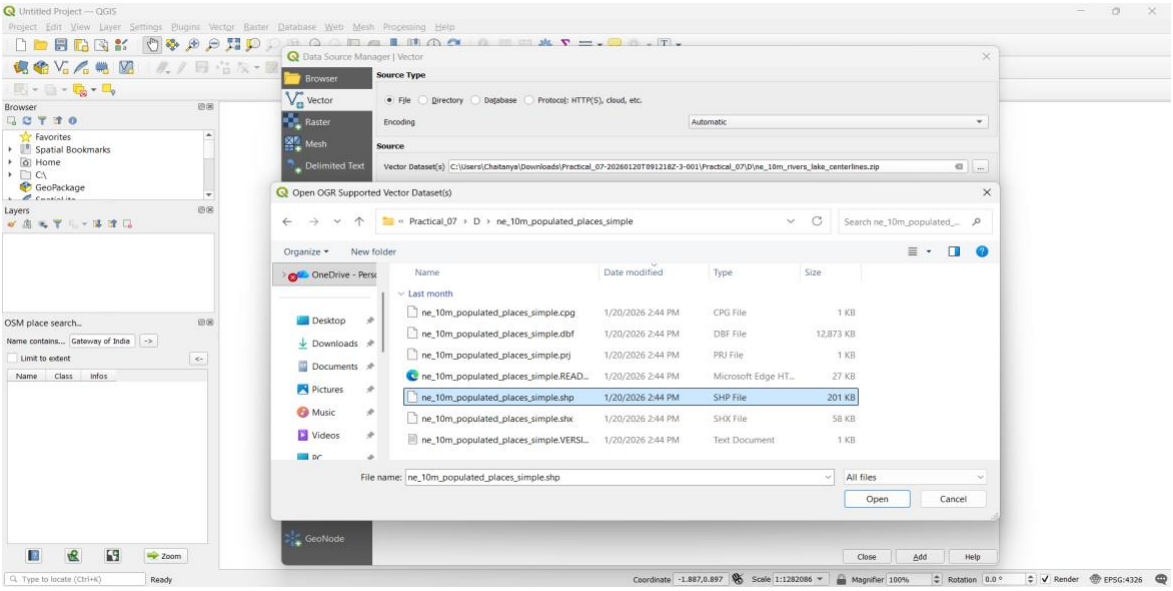

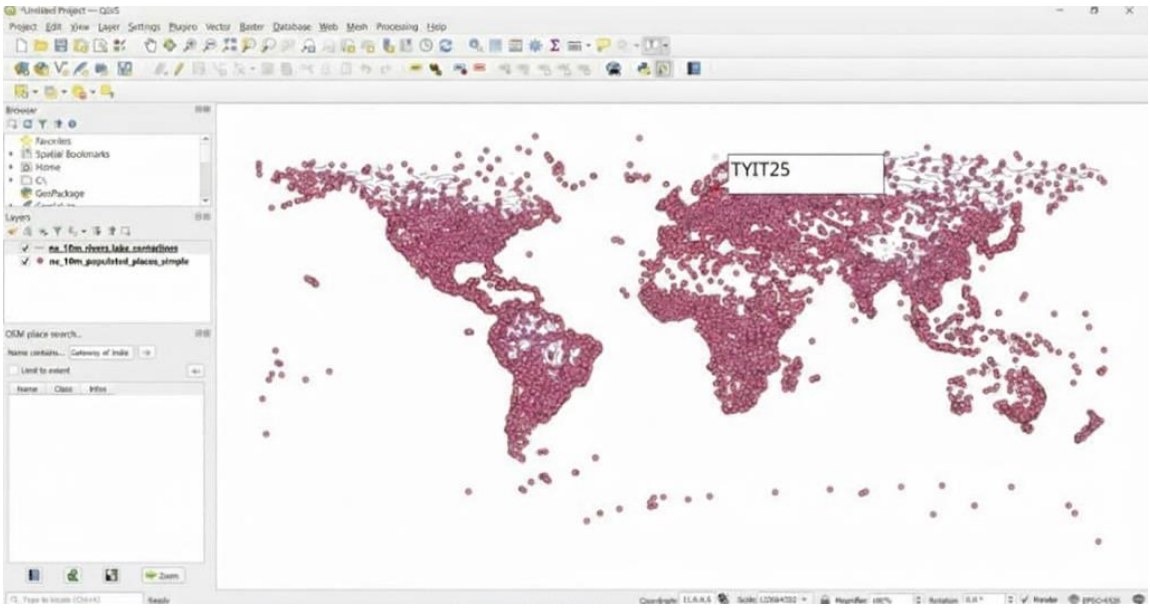

Teacher's Signature

BHAVAN'S COLLEGE AUTONOMOUS, ANDHERI-WEST
PRACTICAL JOURNAL

Class: TYIT **Sem: VI** **Roll No.: TYIT25** **Date: 04-02-2026**

Course Name: Geographic Information System (GIS) **Page no:**

Practical Number:- 07

• Go to Properties of River_lakes centerlines and change the symbol.

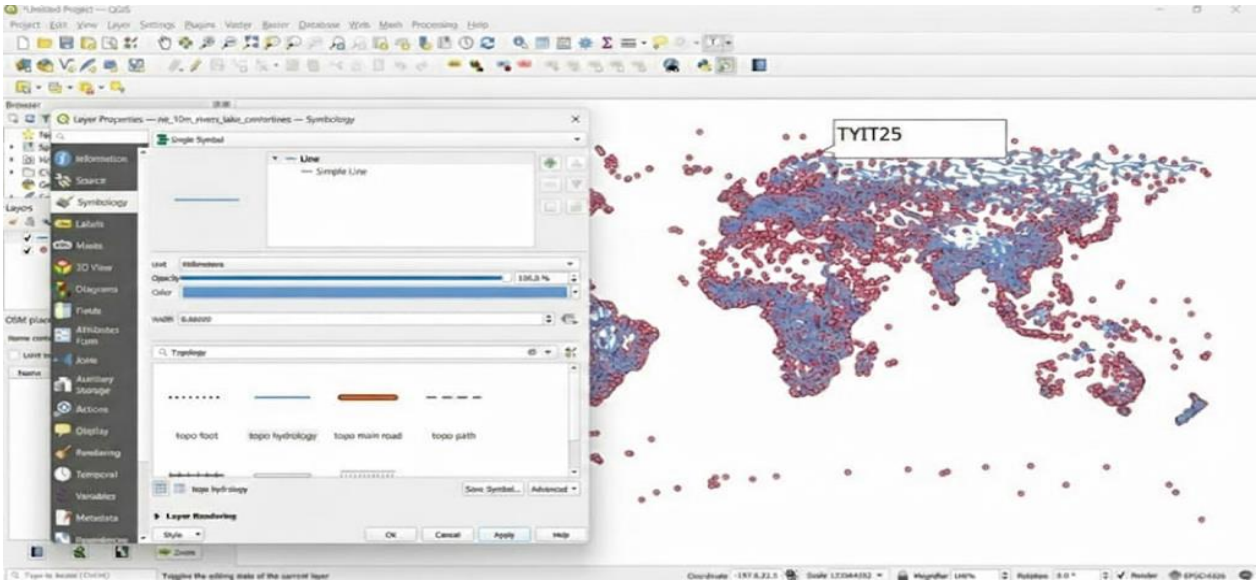

- Open project Properties → Set CRS "World_Azimuthal_Equidistant EPSG 54032" . The map will be reprojected as

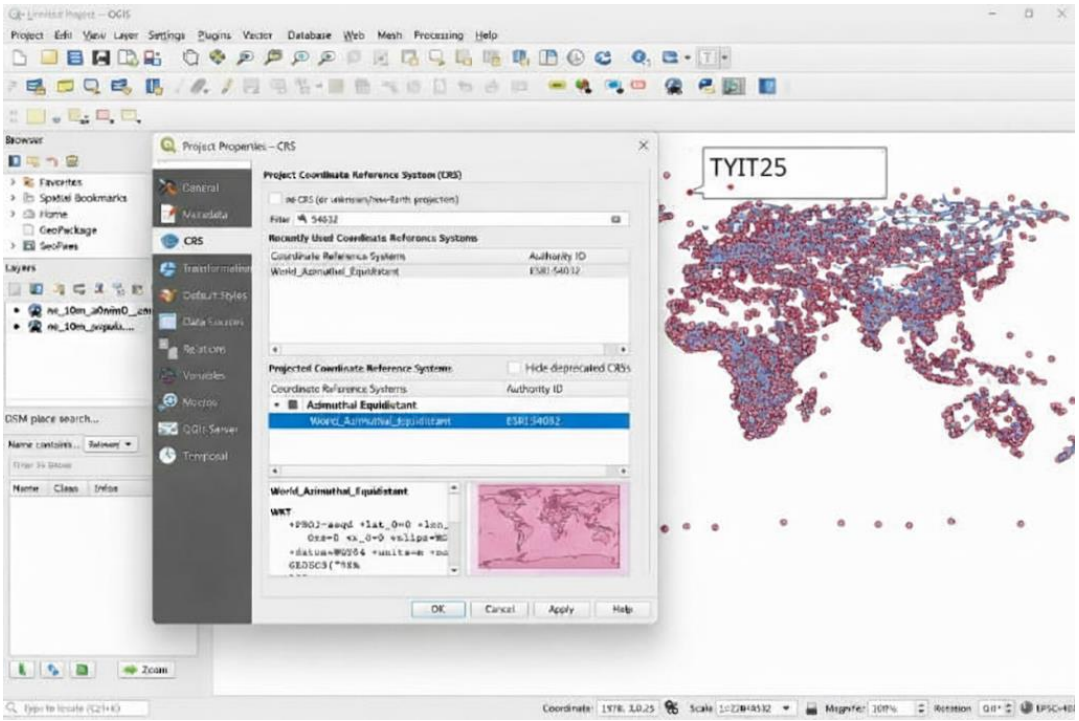

Teacher's Signature

BHAVAN'S COLLEGE AUTONOMOUS, ANDHERI-WEST
PRACTICAL JOURNAL

Class: TYIT **Sem: VI** **Roll No.: TYIT25** **Date: 04-02-2026**

Course Name: Geographic Information System (GIS) **Page no:**

Practical Number:- 07

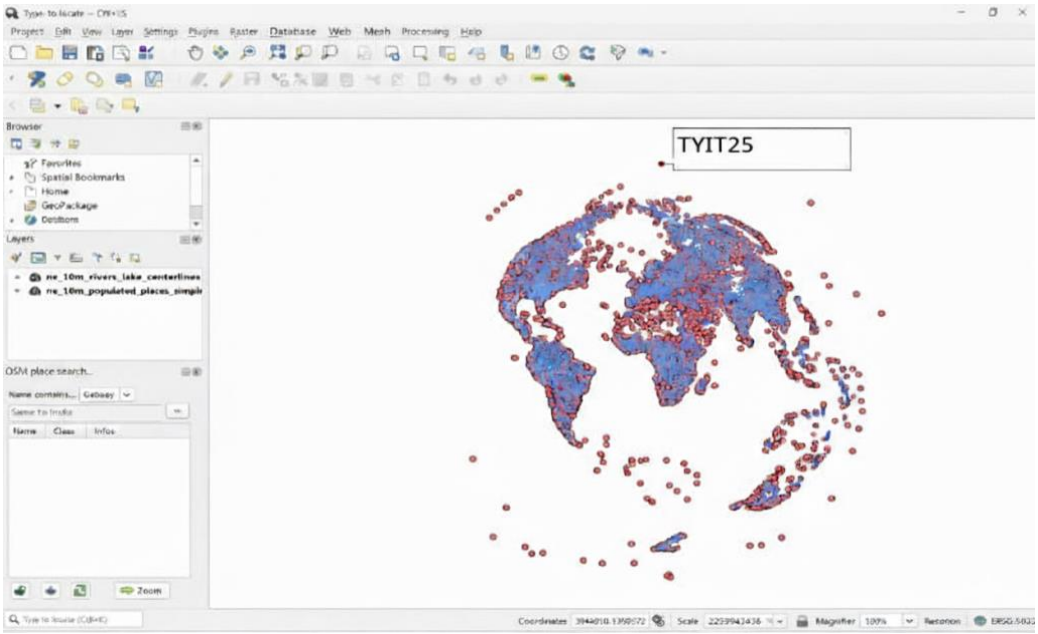

- Go to Vector → Geoprocessing Tool → Buffer

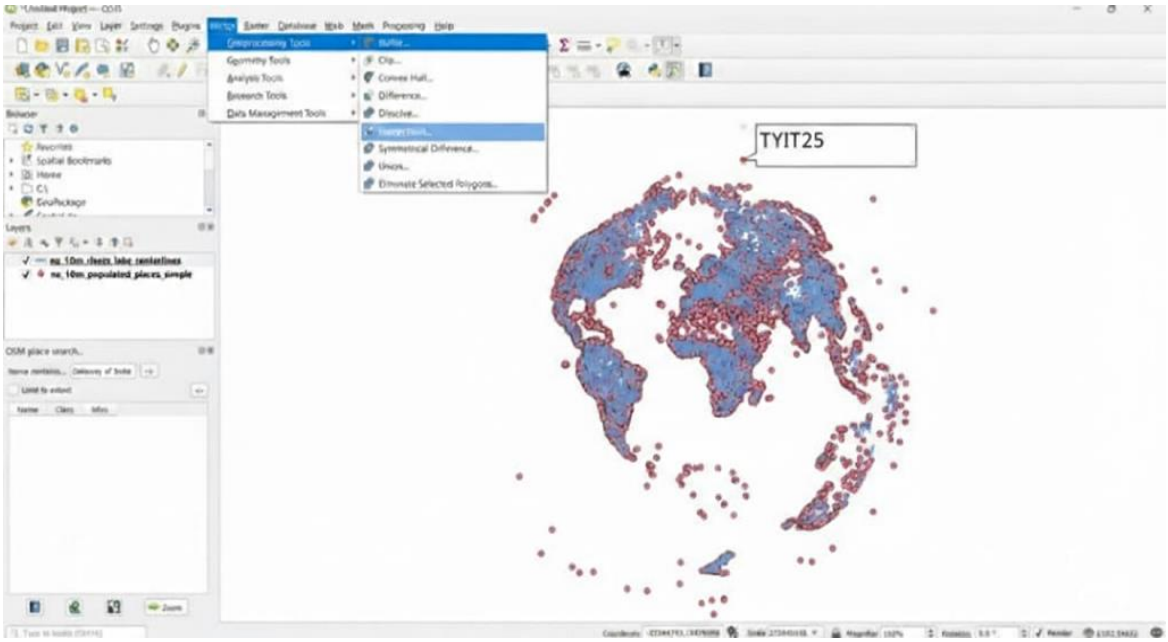

Teacher's Signature

BHAVAN'S COLLEGE AUTONOMOUS, ANDHERI-WEST
PRACTICAL JOURNAL

Class: TYIT **Sem: VI** **Roll No.: TYIT25** **Date: 04-02-2026**

Course Name: Geographic Information System (GIS) **Page no:**

Practical Number:- 07

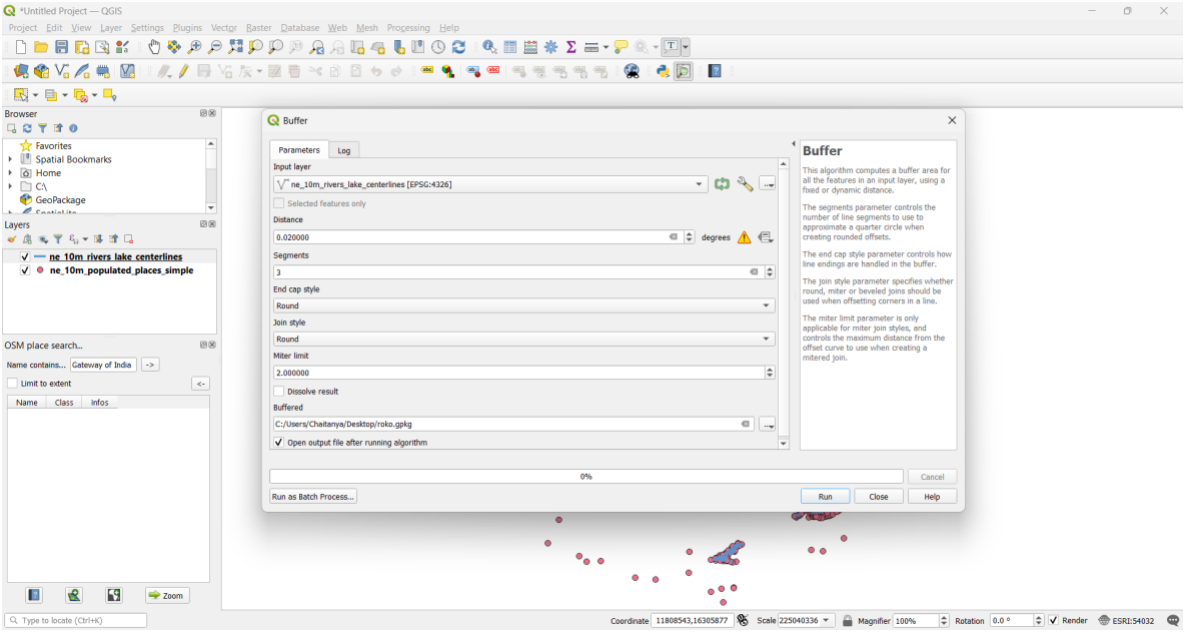

- Create a buffer for River
- Go to Vector → Research Tool → Select By Location

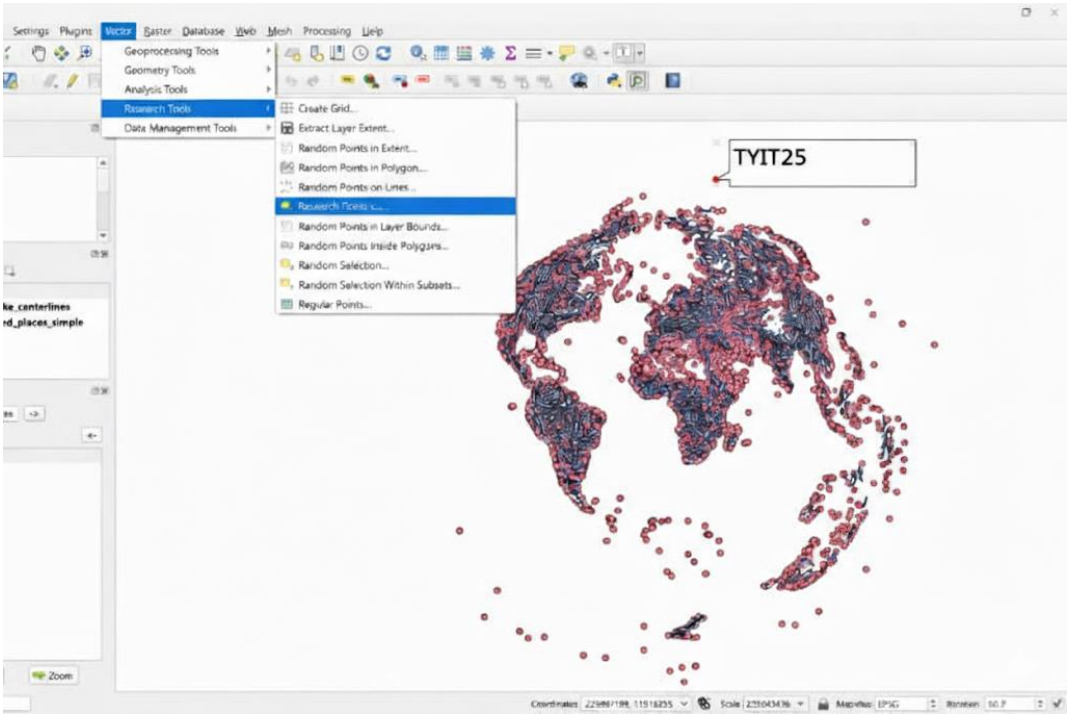

Teacher's Signature

BHAVAN'S COLLEGE AUTONOMOUS, ANDHERI-WEST
PRACTICAL JOURNAL

Class: TYIT **Sem: VI** **Roll No.: TYIT25** **Date: 04-02-2026**

Course Name: Geographic Information System (GIS) **Page no:**

Practical Number:- 07

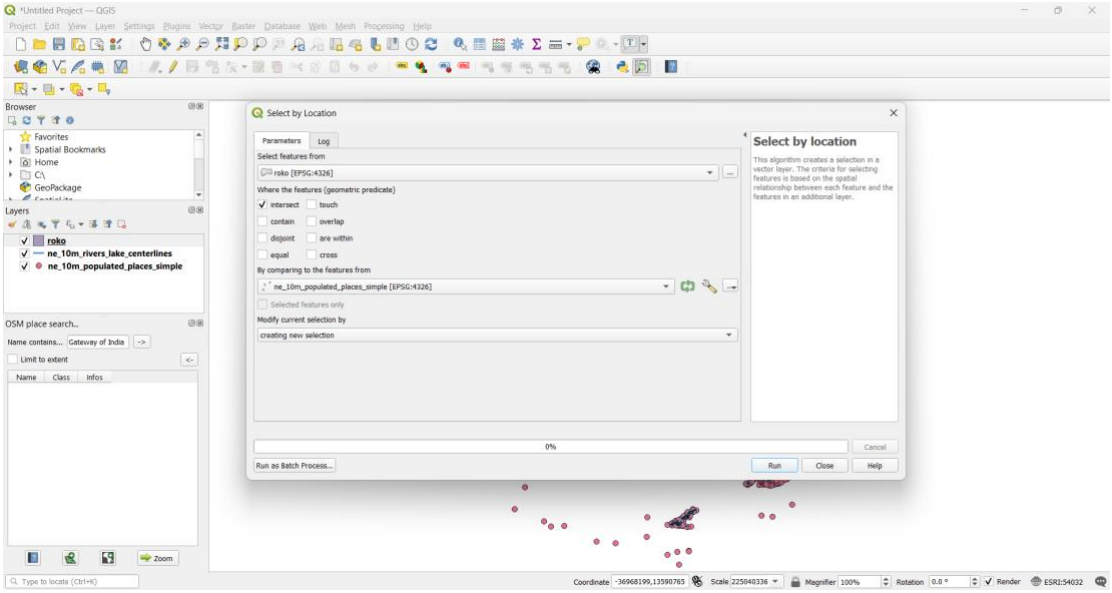

- This will highlight only those rivers containing a populated place within 2 KM
- Go to properties of Buffered layer add Single labels to Display the Rivers name

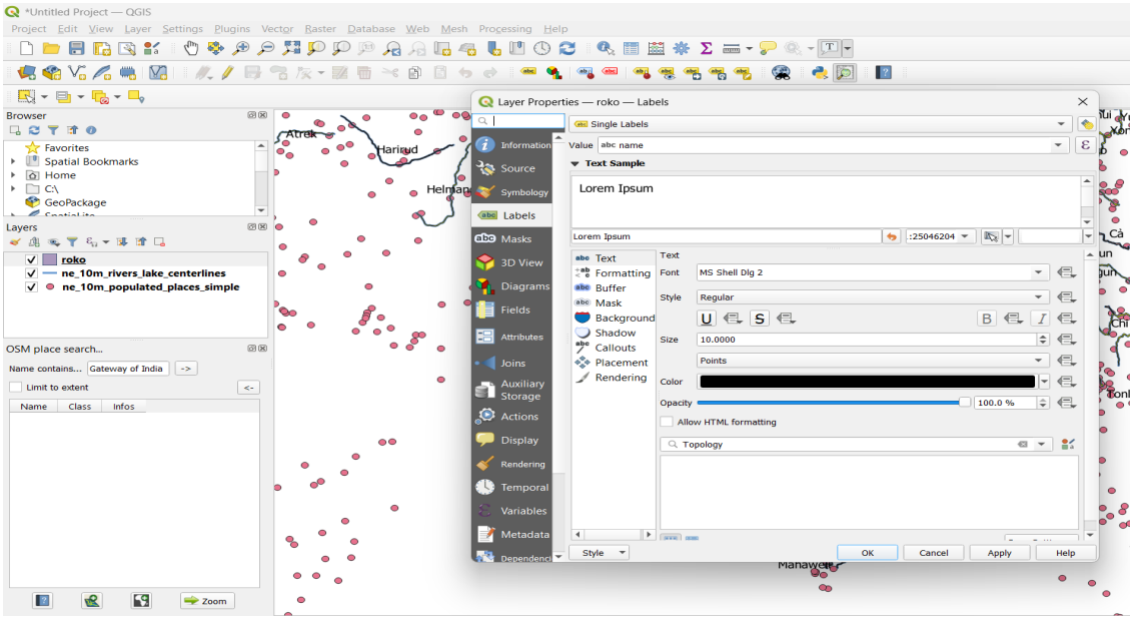

Teacher's Signature

BHAVAN'S COLLEGE AUTONOMOUS, ANDHERI-WEST
PRACTICAL JOURNAL

Class: TYIT **Sem: VI** **Roll No.: TYIT25** **Date: 04-02-2026**

Course Name: Geographic Information System (GIS) **Page no:**

Practical Number:- 07

OUTPUT:

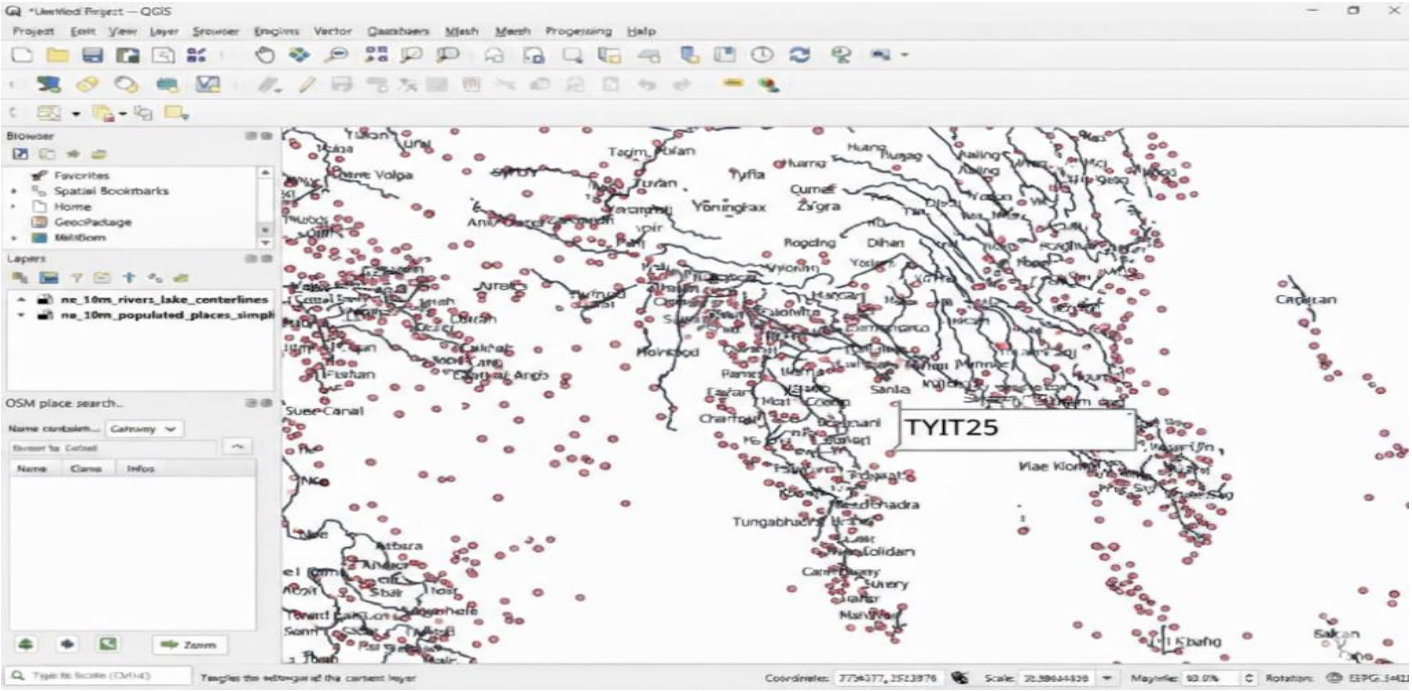

Teacher's Signature