BHAVAN'S COLLEGE AUTONOMOUS, ANDHERI-WEST
PRACTICAL JOURNAL

Class: TYIT **Sem: VI** **Roll No.: TYIT25** **Date: 03-02-2026**

Course Name: Geographical Information System **Page no:**

Practical Number:- 08

Q. Advanced GIS Operations.
A. Nearest neighbor analysis.

1. Open QGIS → new project.
2. Add Vector Layer → select file Practical_08 → DATA → A → ne_10m_populated_places_simple → ne_10m_populated_places_simple.shp → Add → close.

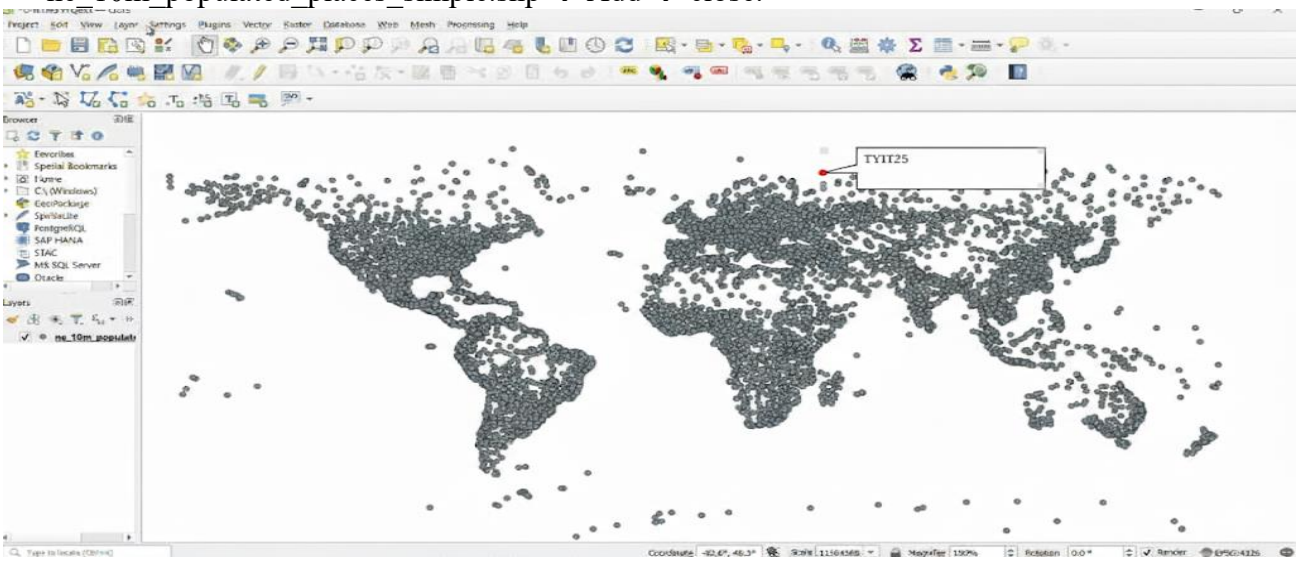

3. Add delimited text layer → select file Practical_08 → DATA → A → earthquakes_2021_11_25_14_31_59_+0530.tsv → do changes → add → close.

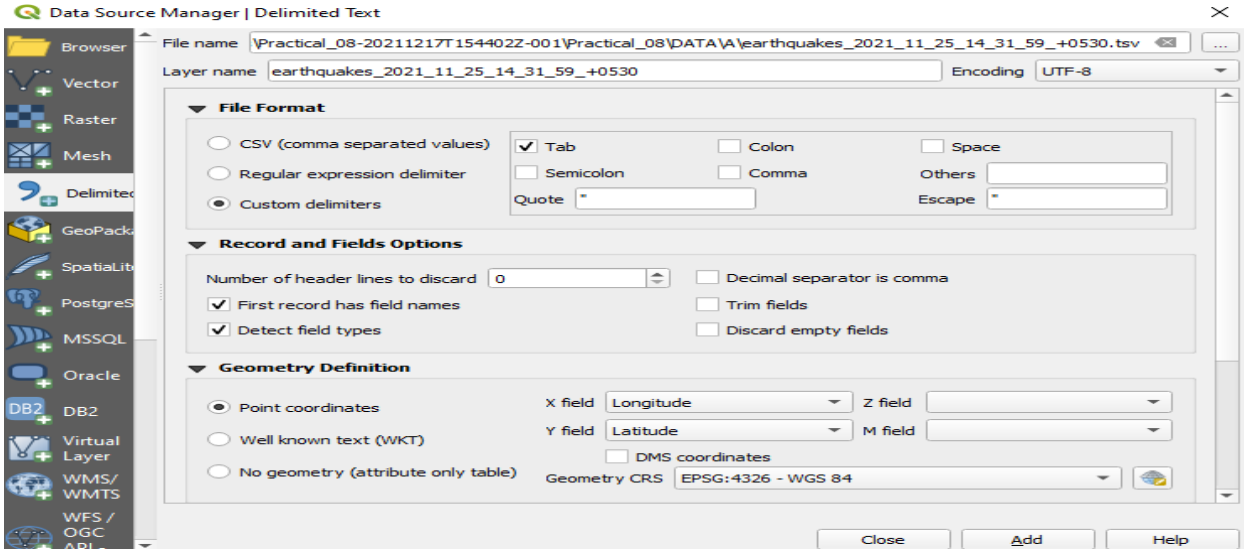

Teacher's Signature

BHAVAN'S COLLEGE AUTONOMOUS, ANDHERI-WEST
PRACTICAL JOURNAL

Class: TYIT **Sem: VI** **Roll No.: TYIT25** **Date: 03-02-2026**

Course Name: Geographical Information System **Page no:**

Practical Number:- 08

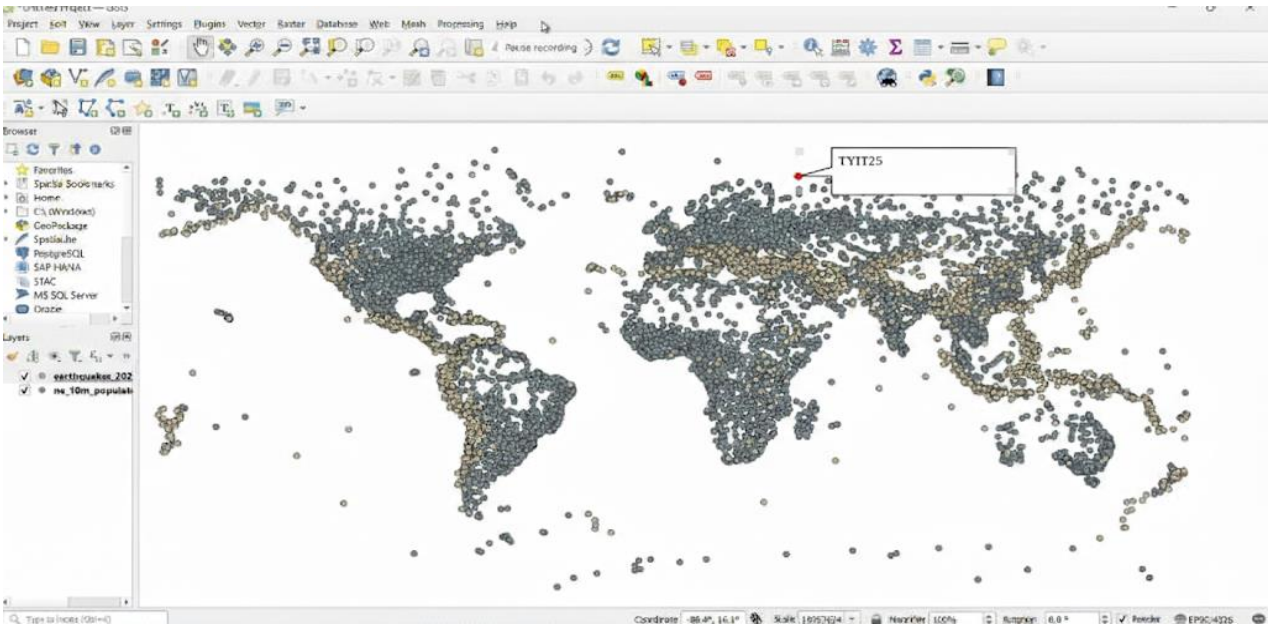

4. Click on processing → toolbox → Vector geometry → double click on Remove null geometries → do changes → run.

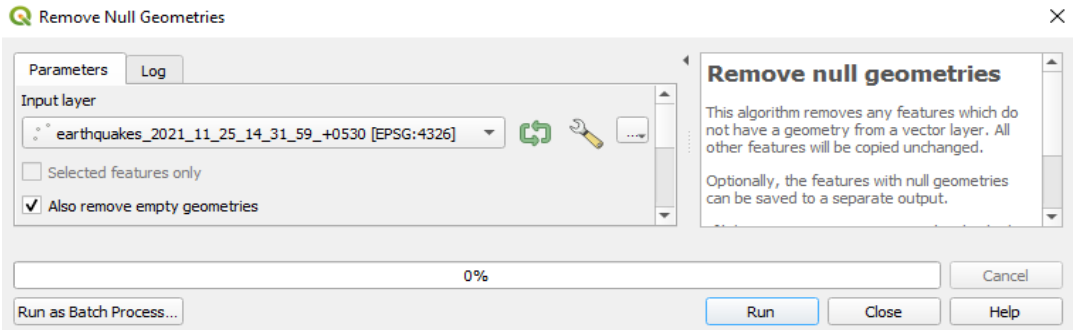

Teacher's Signature

BHAVAN'S COLLEGE AUTONOMOUS, ANDHERI-WEST
PRACTICAL JOURNAL

Class: TYIT **Sem: VI** **Roll No.: TYIT25** **Date: 03-02-2026**

Course Name: Geographical Information System **Page no:**

Practical Number:- 08

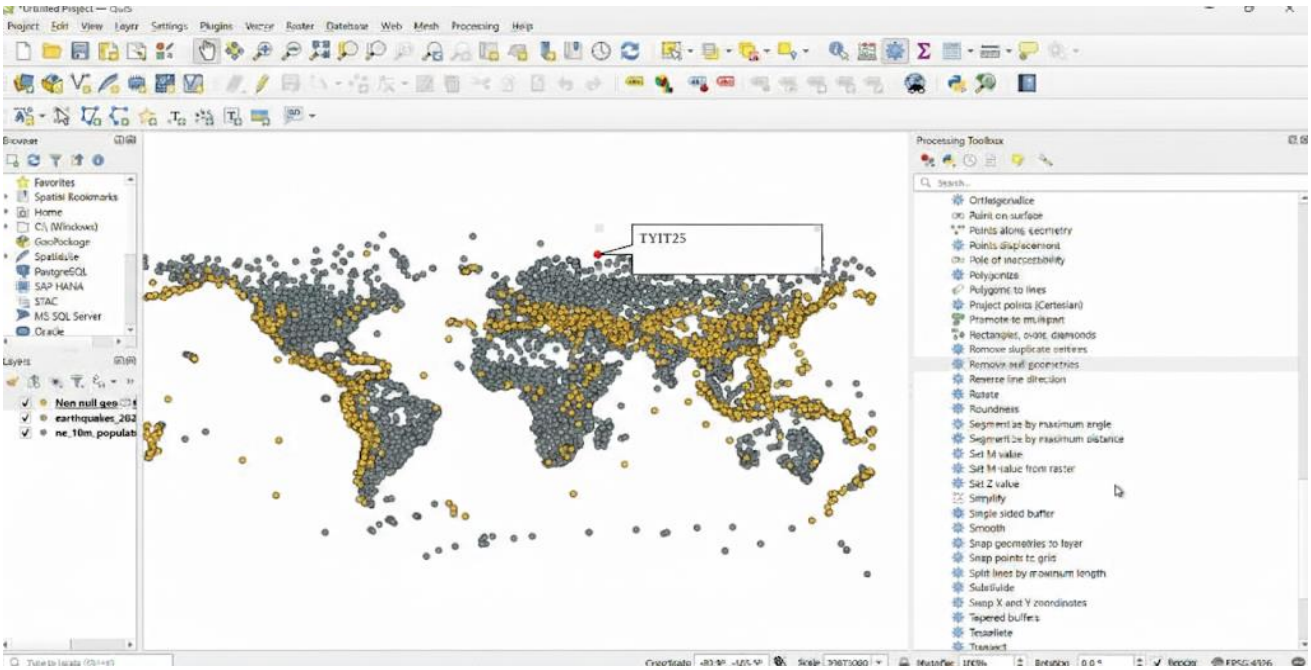

5. Again click on processing → toolbox → vector analysis → double click on distance to nearest hub (line to hub) → run.

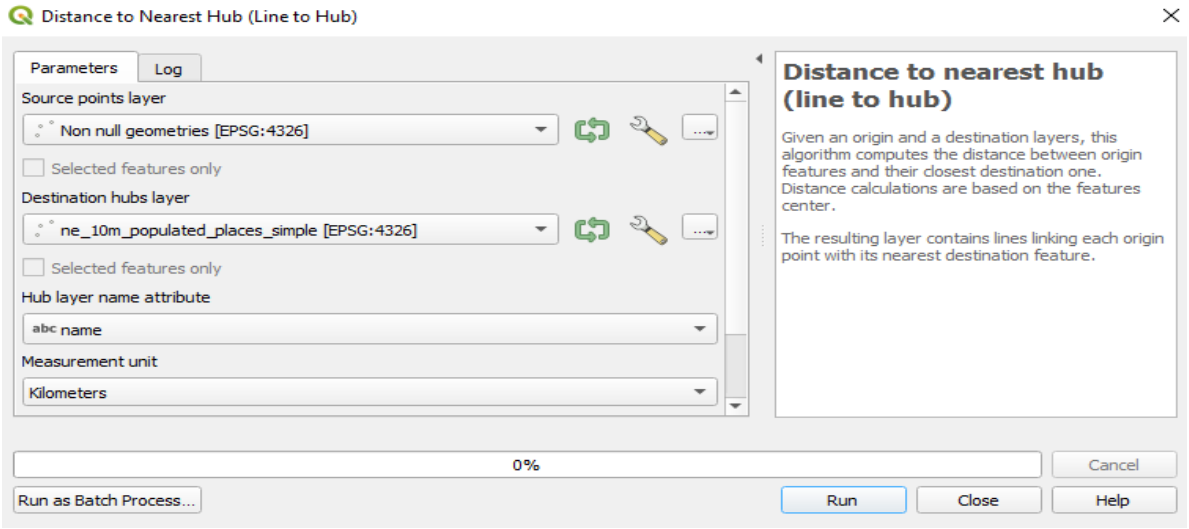

OUTPUT:

Teacher's Signature

BHAVAN'S COLLEGE AUTONOMOUS, ANDHERI-WEST
PRACTICAL JOURNAL

Class: TYIT **Sem: VI** **Roll No.: TYIT25** **Date: 03-02-2026**

Course Name: Geographical Information System **Page no:**

Practical Number:- 08

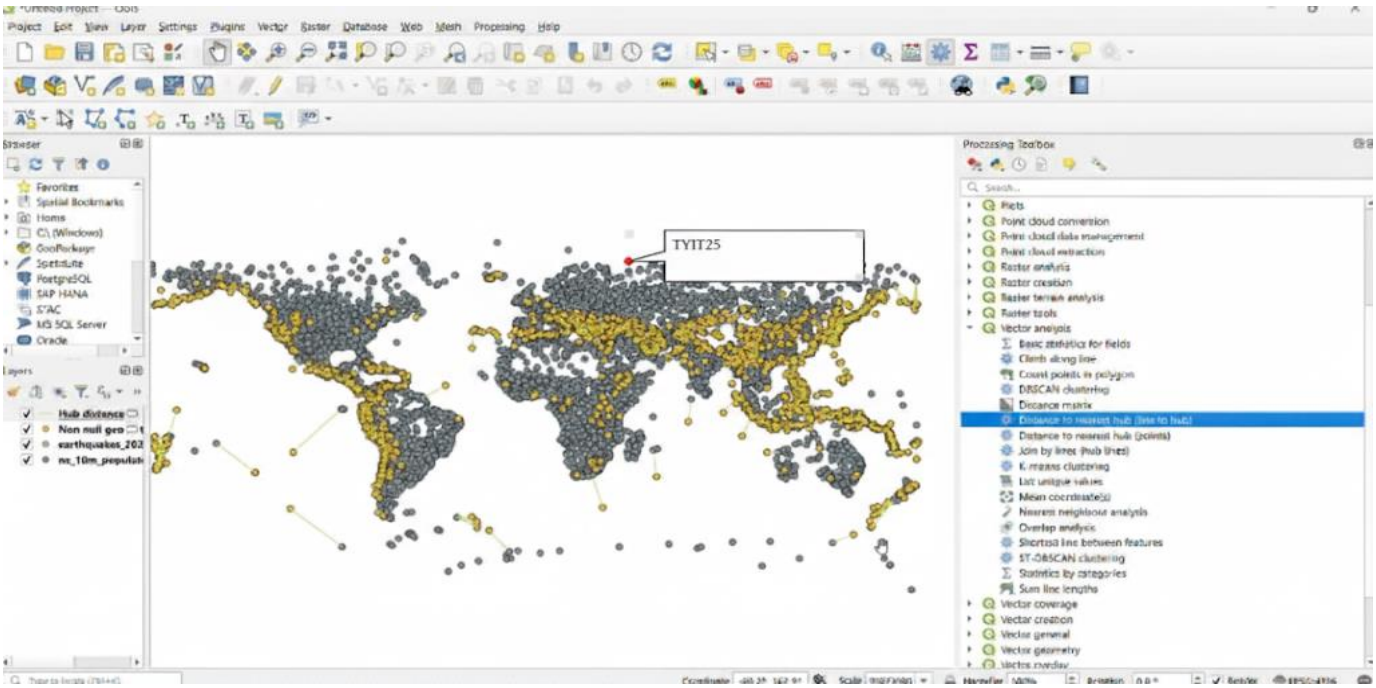

B. Sampling raster data using point or polygons.

1. New project.
2. Click on Add raster layer → select file practical_8 → DATA → B → us.tmax_nohads_ll_20140525_float.tif → add → close.
3. Add delimited text layer → select file practical_8 → DATA → B → 2013_Gaz_ua_national → 2013_Gaz_ua_national.txt → and do some changes → add → close.

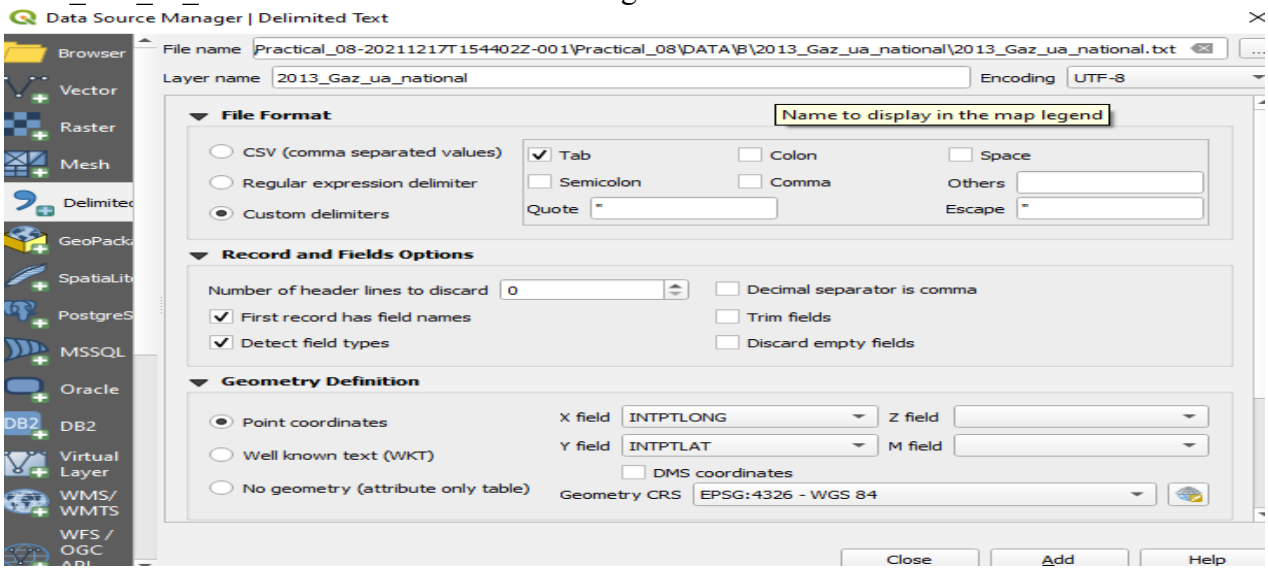

Teacher's Signature

BHAVAN'S COLLEGE AUTONOMOUS, ANDHERI-WEST
PRACTICAL JOURNAL

Class: TYIT **Sem: VI** **Roll No.: TYIT25** **Date: 03-02-2026**

Course Name: Geographical Information System **Page no:**

Practical Number:- 08

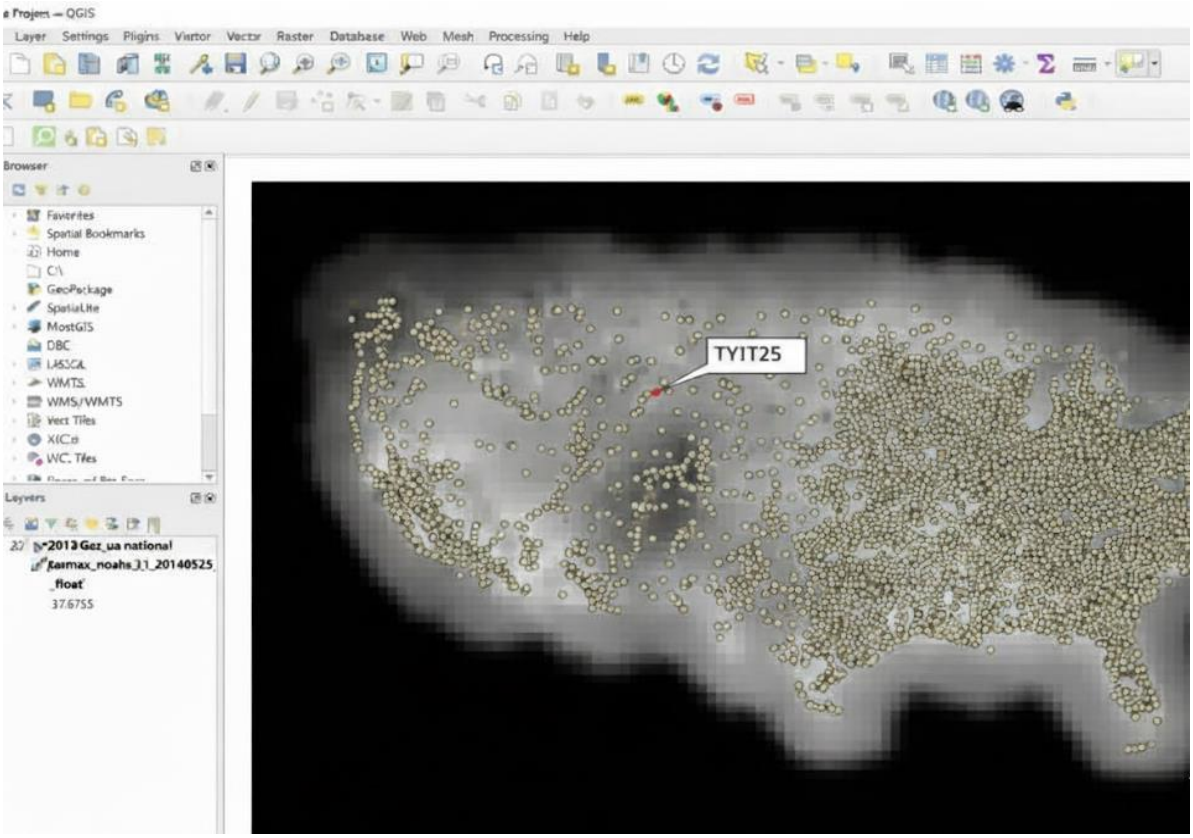

4. Processing tab → toolbox → raster analysis → sample raster values → do changes → run → close.

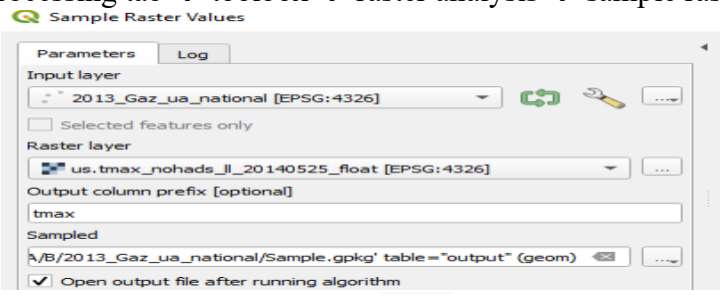

5. Then click on Identify features .

Teacher's Signature

BHAVAN'S COLLEGE AUTONOMOUS, ANDHERI-WEST
PRACTICAL JOURNAL

Class: TYIT **Sem: VI** **Roll No.: TYIT25** **Date: 03-02-2026**

Course Name: Geographical Information System **Page no:**

Practical Number:- 08

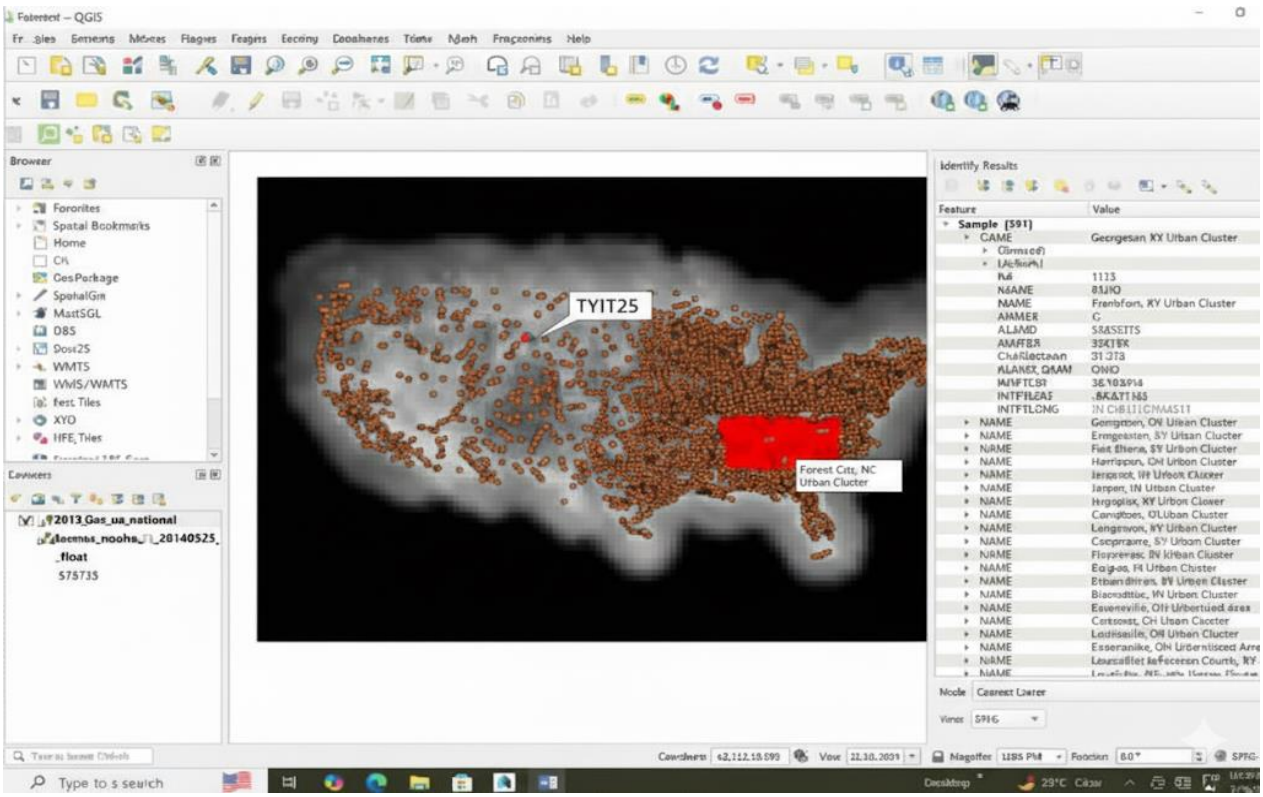

6. Right click on output layer → open attribute table.

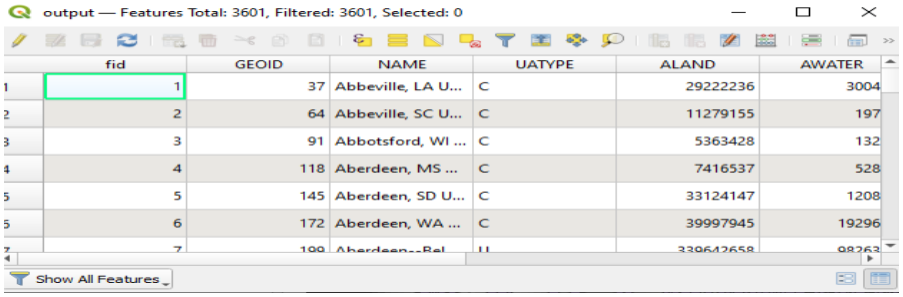

	fid	GEOID	NAME	UATYPE	ALAND	AWATER
1	1	37	Abbeville, LA U...	C	29222236	3004
2	2	64	Abbeville, SC U...	C	11279155	197
3	3	91	Abbotsford, WI ...	C	5363428	132
4	4	118	Aberdeen, MS ...	C	7416537	528
5	5	145	Aberdeen, SD U...	C	33124147	1208
6	6	172	Aberdeen, WA ...	C	39997945	19296

7. Add vector layer → Practical_08 → DATA → B → tl_2018_us_county → tl_2018_us_county.shp → add.

Teacher's Signature

BHAVAN'S COLLEGE AUTONOMOUS, ANDHERI-WEST
PRACTICAL JOURNAL

Class: TYIT **Sem: VI** **Roll No.: TYIT25** **Date: 03-02-2026**

Course Name: Geographical Information System **Page no:**

Practical Number:- 08

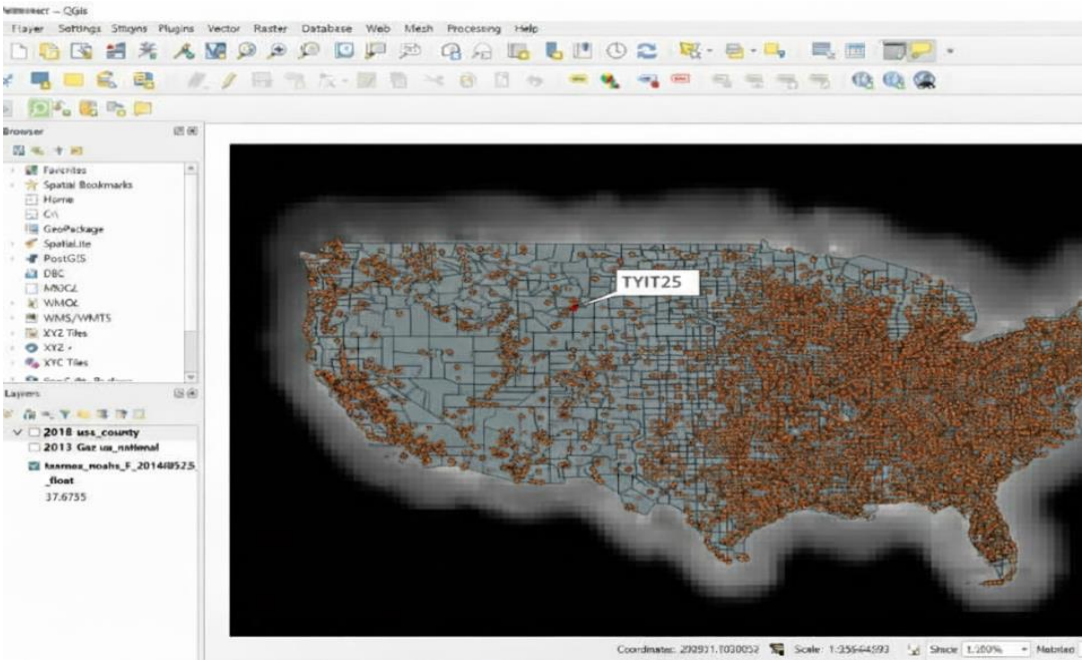

8. Processing → toolbox → raster analysis → zonal statistics.

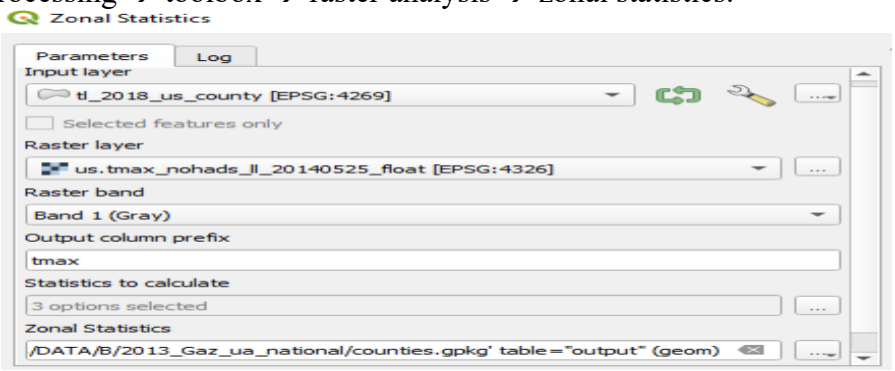

9. Right click on output 2 → properties → symbology → do changes → apply → ok.

Teacher's Signature

BHAVAN'S COLLEGE AUTONOMOUS, ANDHERI-WEST
PRACTICAL JOURNAL

Class: TYIT **Sem: VI** **Roll No.: TYIT25** **Date: 03-02-2026**

Course Name: Geographical Information System **Page no:**

Practical Number:- 08

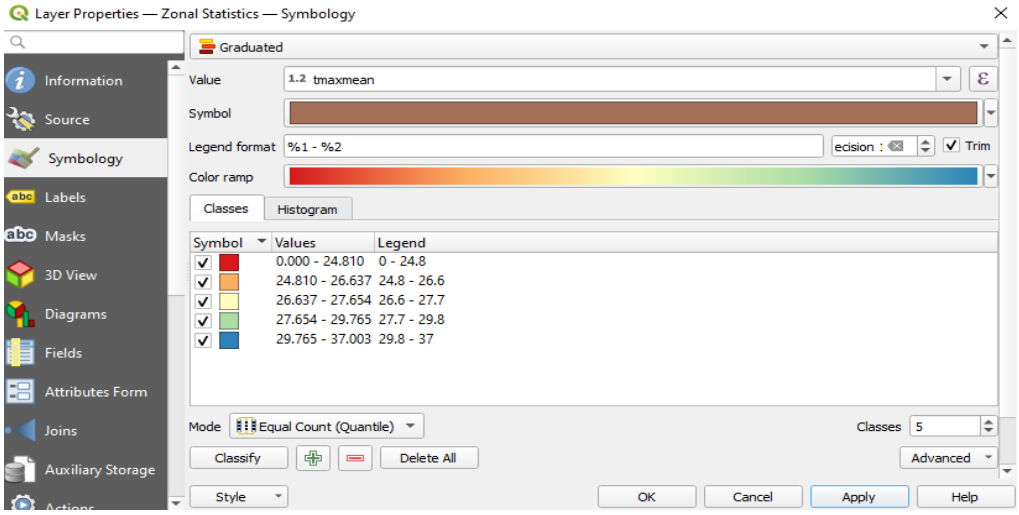

OUTPUT:

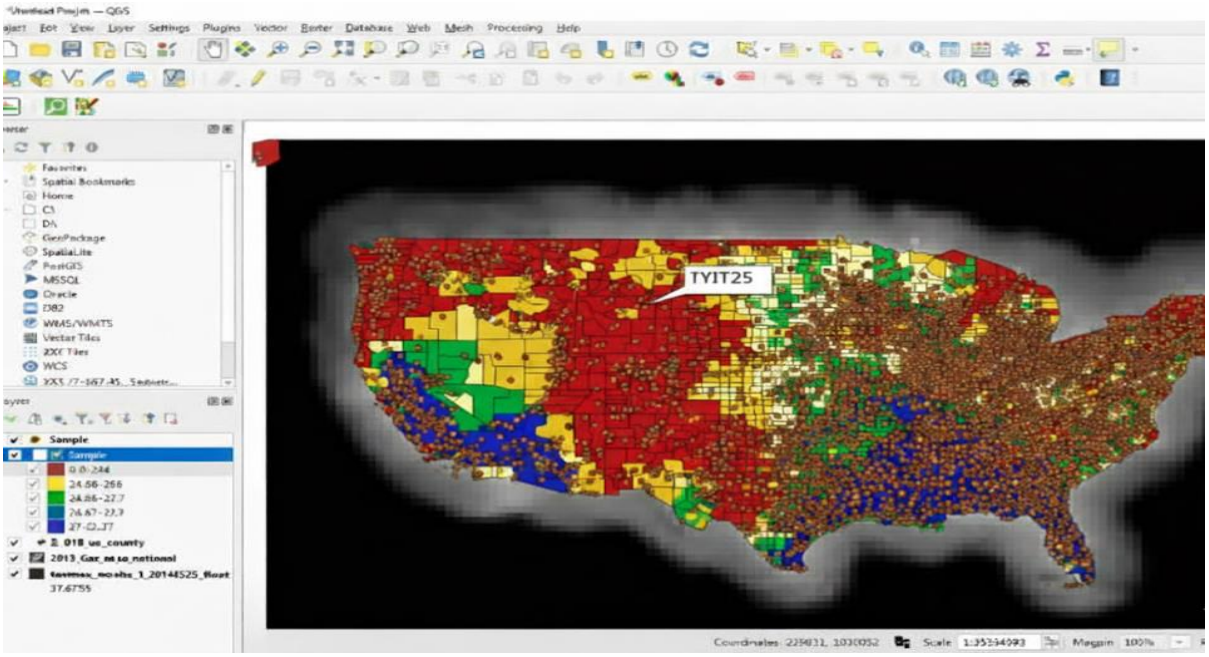

C. interpolating point data.

1. New project.
2. Add vector layer → select file practical_8 → C → Shapefiles → Arlington_Soundings_2007_stpl83.shp → add → again select file → Practical_08-20211217T154402Z-001 → Practical_08 → DATA → C → Shapefiles → Boundary2004_550_stpl83.shp → add → close.

Teacher's Signature

BHAVAN'S COLLEGE AUTONOMOUS, ANDHERI-WEST
PRACTICAL JOURNAL

Class: TYIT **Sem: VI** **Roll No.: TYIT25** **Date: 03-02-2026**

Course Name: Geographical Information System **Page no:**

Practical Number:- 08

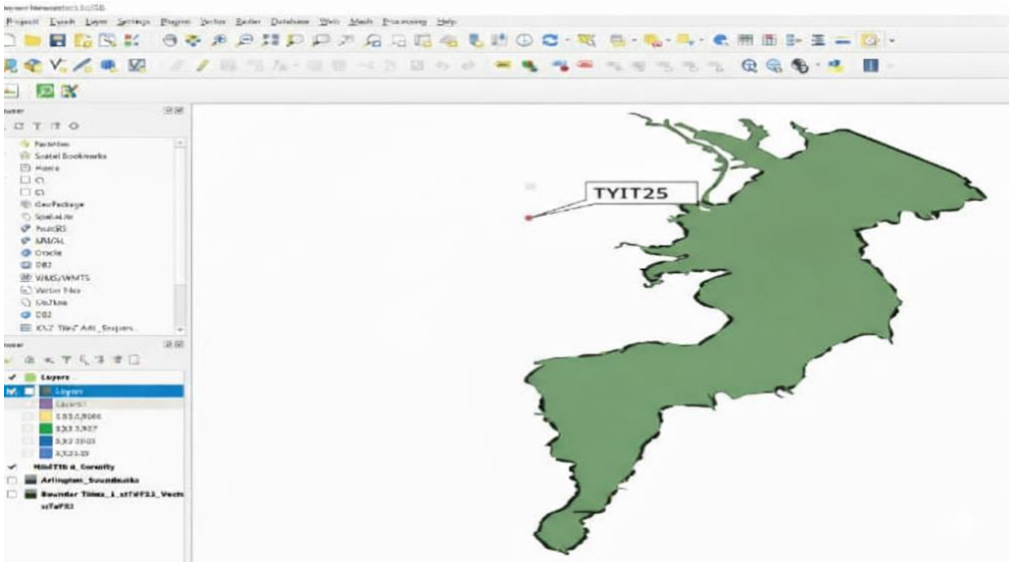

3. Unselect Boundary2004_550_stpl83 → click on identify features → right click on dot → identify all(1331).

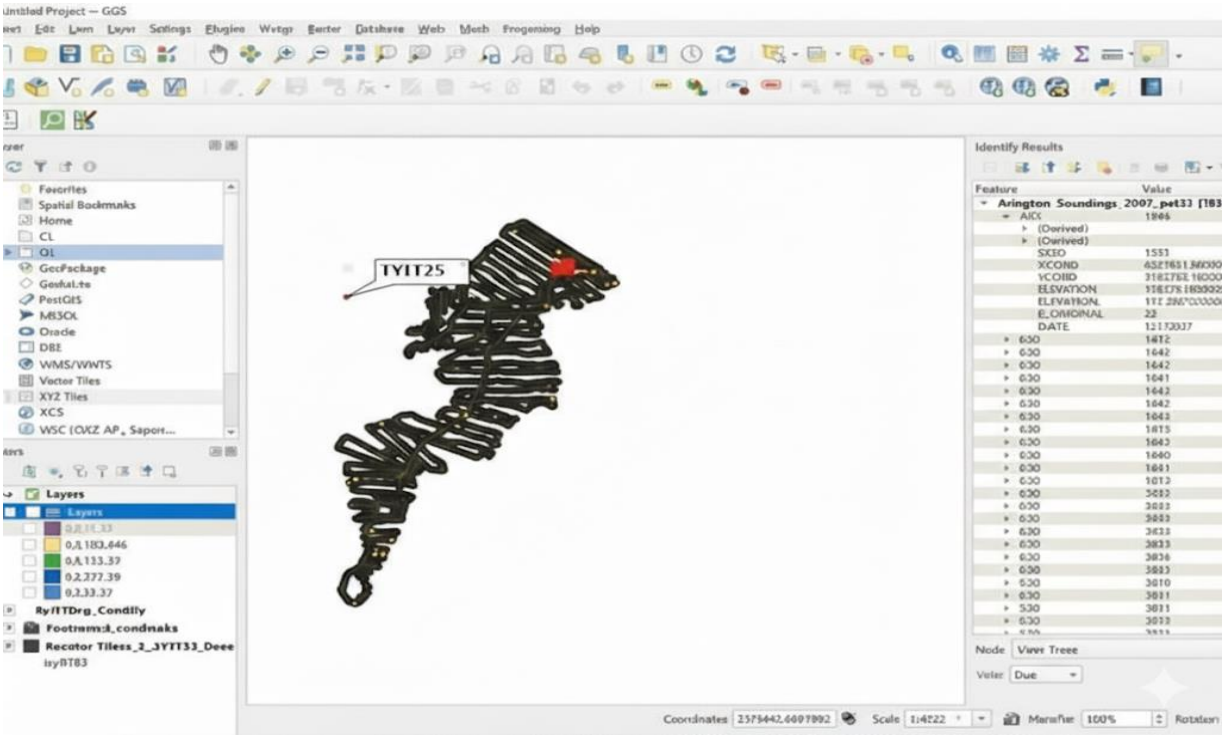

Teacher's Signature

BHAVAN'S COLLEGE AUTONOMOUS, ANDHERI-WEST
PRACTICAL JOURNAL

Class: TYIT **Sem: VI** **Roll No.: TYIT25** **Date: 03-02-2026**

Course Name: Geographical Information System **Page no:**

Practical Number:- 08

4. Add vector layer → Practical_08 → DATA → C → Shapefiles → Islands_2004_550_stpl83.shp → add → close.

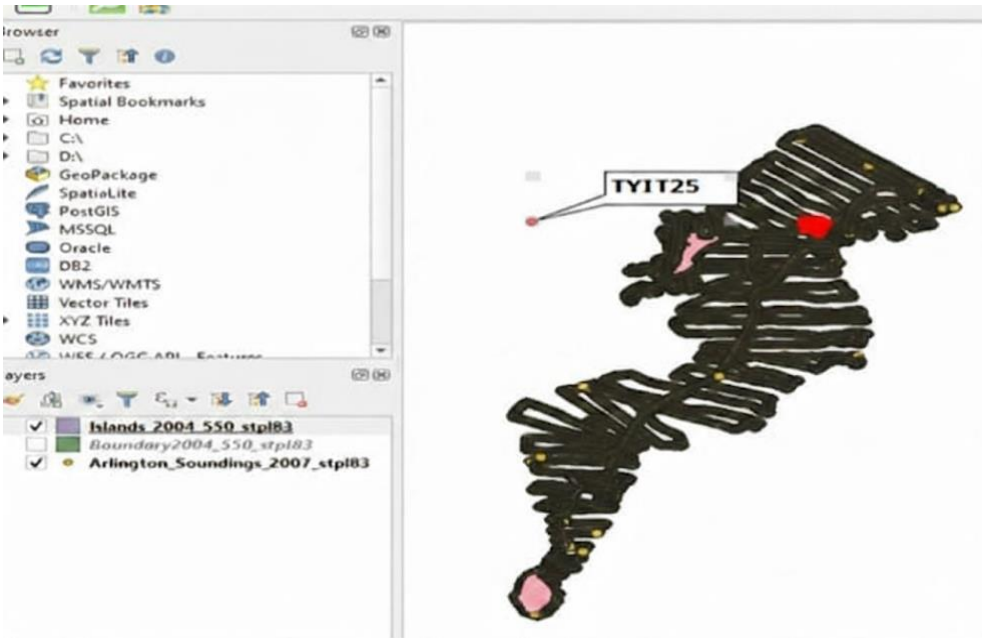

5. Click on processing → toolbox → interpolation → TIN interpolation → do changes → run → close.

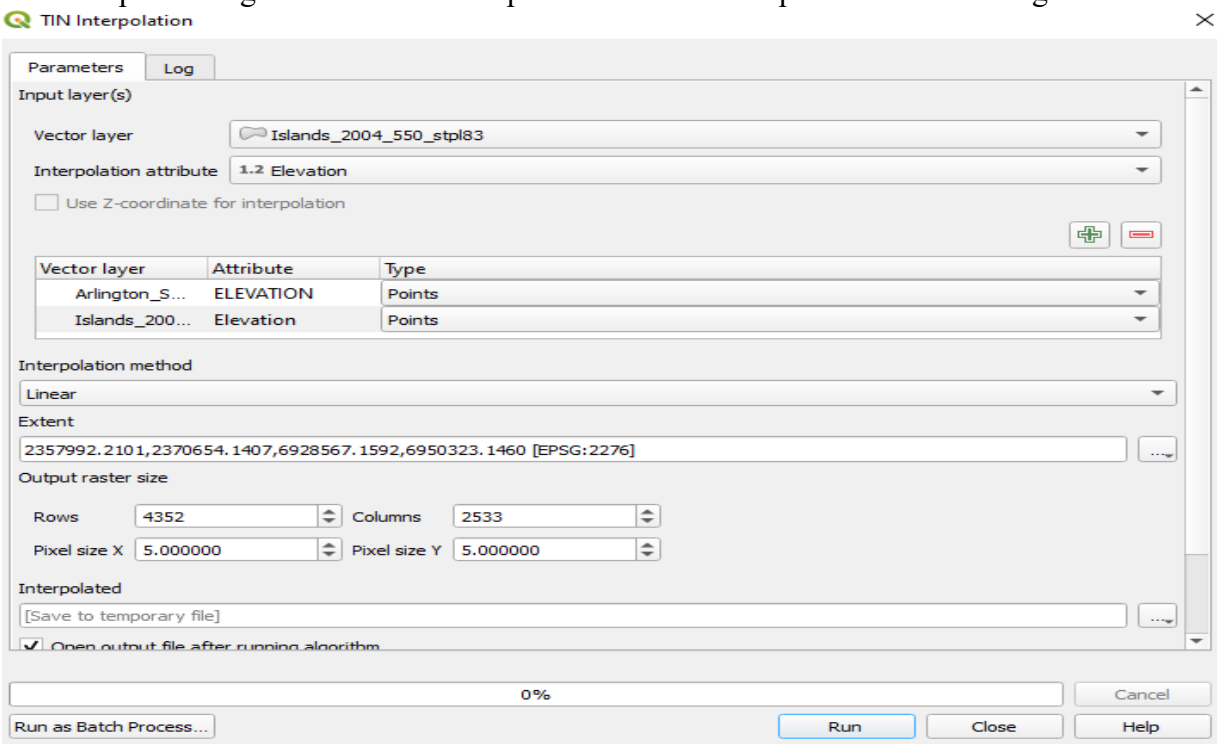

Teacher's Signature

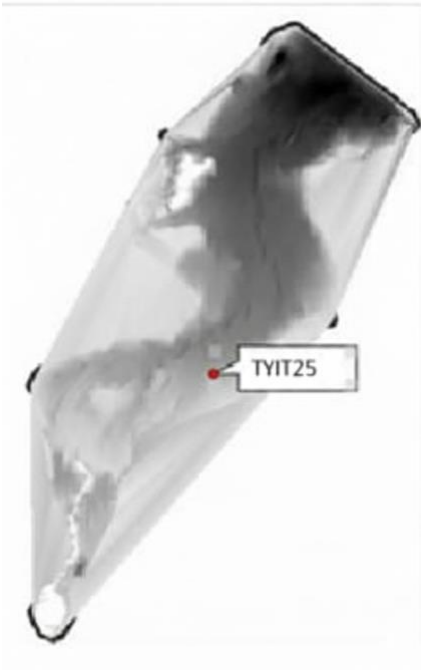

6. Accept Interpolated other unselect.

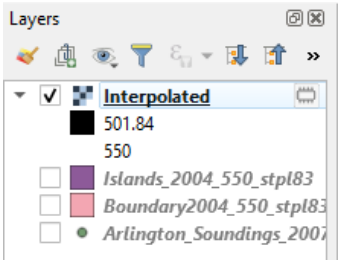

7. Processing → toolbox → GDAL → raster extraction → clip raster mask layer → run → close.(unselect other)

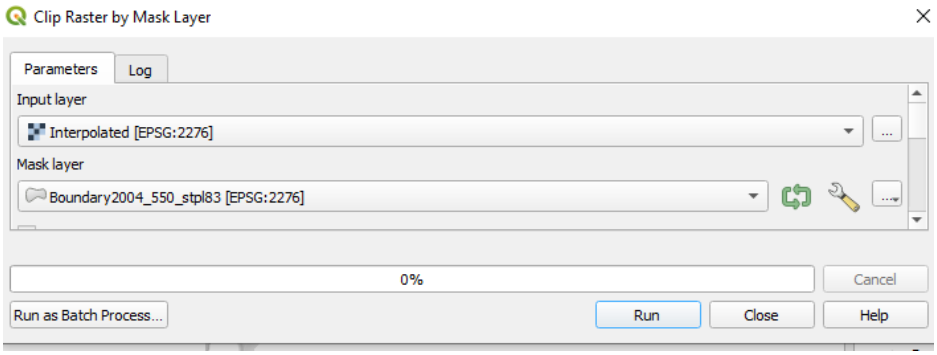

8. Right click on clipped → properties → symbology → change render type: single pseudcolor.

Teacher's Signature

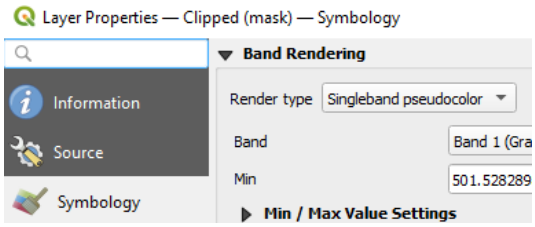

9. Processing → toolbox → GDAL → contour → change → run → close.

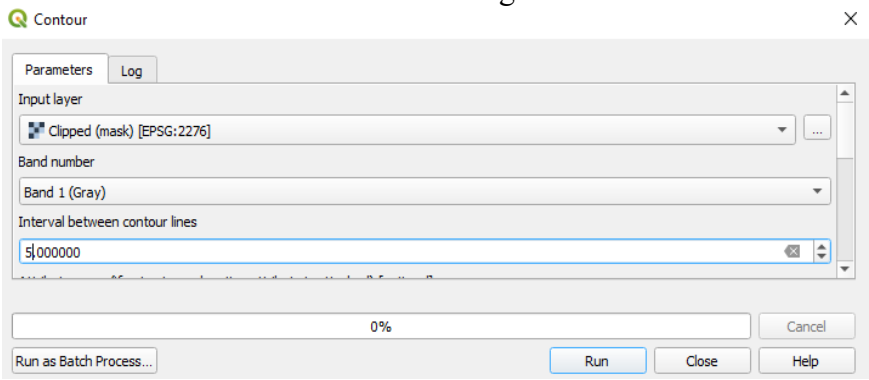

10. Right click on contour → properties → → labels → changes → apply → ok.

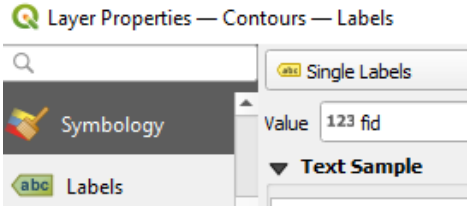

OUTPUT:

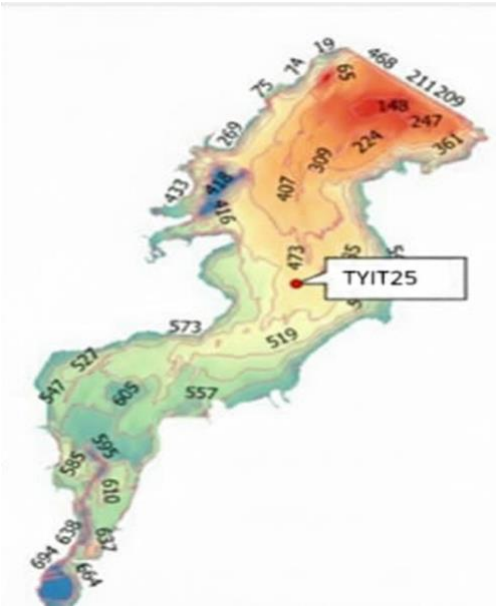

Teacher's Signature